VEER MADHO SINGH BHANDARI UTTARAKHAND TECHNICAL UNIVERSITY, CHANDANWADI, SUDHOWALA, DEHRADUN, UTTARAKHAND - 248007

"Gurgaon Real Estate Intelligence System Using Random Forest and Distance - Location Based Recommendation"

A

Final Year Project Report

(2022–26)

Submitted in partial fulfillment for the award of

Bachelor of Technology in Computer Science and Engineering from

ROORKEE COLLEGE OF ENGINEERING,
5KM UPPER GANGA CANAL ROAD, BAJUHERI, ROORKEE - 247667

Under Department of Computer Science and Engineering

Completed under the supervision
of
Mr. Narayan Jee
(Assistant Professor, Dept. of Computer Science & Engineering)

Submitted by:

Navneet Kumar (221020101062)
Anchal Maurya (221020101020)
Swarnima Kumari (221020101104)

Declaration

I hereby declare that the project titled **“Gurgaon Real Estate Intelligence System Using Random Forest and Distance - Location Based Recommendation ”** is an original work carried out by me for academic and learning purposes. The project has been developed using Python, Machine Learning, and Streamlit technologies under proper guidance and support.

I confirm that this project report has not been submitted previously to any institution, university, or organization for the award of any degree, diploma, or certification. The information and resources used in this project are properly acknowledged wherever required.

Submitted By:

Navneet Kumar (221020101062)
Anchal Maurya (221020101020)
Swarnima Kumari (221020101104)

Certificate

This is to certify that the following students has successfully completed the project titled **"Gurgaon Real Estate Intelligence System Using Random Forest and Distance - Location Based Recommendation"** as part of academic learning and practical implementation in the field of Artificial Intelligence and Machine Learning.

The project work has been carried out using Python, Machine Learning algorithms, Data Analysis, and Streamlit under proper guidance. The work submitted by the student is genuine and fulfills the required standards for project submission.

We wish him success in all future endeavors.

Submitted By:

Navneet Kumar (221020101062)
Anchal Maurya (221020101020)
Swarnima Kumari (221020101104)

Mr. Narayan Jee

Supervisor

Dr. Himanshu Verma

Head of Department

Acknowledgement

I would like to express my sincere gratitude to all those who supported and guided me throughout the completion of this project titled **"Gurgaon Real Estate Intelligence System Using Random Forest and Distance - Location Based Recommendation"**

I am thankful to my teachers, mentors, and online learning resources for providing valuable guidance and knowledge related to Machine Learning, Data Analysis, and Streamlit development. Their support helped me understand the concepts and complete this project successfully.

We are also grateful to the faculty members and staff of the Department of Computer Science and Engineering for their valuable assistance, motivation, and moral support throughout our academic journey. Their guidance and encouragement played an important role in the successful completion of this project.

We extend our sincere thanks to our institution**, Roorkee College of Engineering**, and the affiliated university, **Veer Madho Singh Bhandari Uttarakhand Technical University**, for providing us with the opportunity and platform to explore, learn, and develop a project that aligns with academic and technological advancements.

Last but not least, we express our heartfelt gratitude to our parents, friends, and peers for their continuous encouragement, patience, and support throughout the completion of this project.

Submitted By:

Navneet Kumar (221020101062)
Anchal Maurya (221020101020)
Swarnima Kumari (221020101104)

Abstract

The **Gurgaon Real Estate Intelligence System Using Random Forest and Distance - Location Based Recommendation** is a Machine Learning based project developed to analyze and predict house prices using various property features and real estate data under the guidance of **Mr. Narayan Jee**. The main objective of this project is to help users estimate property prices accurately and provide suitable property recommendations based on user preferences and similarity analysis.

The project uses different technologies such as Python, Pandas, NumPy, Scikit-learn, and Streamlit along with data visualization libraries to build an interactive and user-friendly web application. The system performs data preprocessing, feature engineering, model training, and prediction to generate reliable results.

Different Machine Learning algorithms such as Linear Regression, Decision Tree Regressor, Random Forest Regressor, Extra Trees Regressor, and XGBoost were implemented and evaluated using performance metrics like R^2 Score and Mean Absolute Error (MAE). Among these models, the **Random Forest Regressor** achieved strong prediction performance with an **R^2 Score of approximately 90%** and a **Mean Absolute Error (MAE) of 0.44**, indicating high prediction accuracy and low prediction error.

In addition to price prediction, the project also includes visualization and analytics modules that help users understand market trends, location-based pricing, and property comparisons through charts, maps, and graphical analysis. A recommendation system is also implemented to suggest similar properties based on selected criteria.

This project demonstrates the practical implementation of Machine Learning and Data Analytics in the real estate domain and provides valuable insights for buyers, sellers, and investors to make better property-related decisions.

TABLE OF CONTENTS

CHAPTER / SECTION **PAGE NO.**

Declaration i

Certificate ii

Acknowledgement..... iii

Abstract iv

1 Introduction.....1

1.1 Background of the Problem.....1
1.2 Motivation for the Project 3
1.3 Scope of the Project.....4
1.4 Objectives.....5
1.5 Problem Statement 6

2 Literature Review 7

2.1 Related Research and Existing Platforms.....7
2.1.1 Professional Networking Platforms 8
2.1.2 Academic Collaboration Platforms.....9
2.1.3 Research Papers Related to House Price Prediction 10
2.2 Gaps and Problems in Existing Systems 13
2.3 How Connect I Addresses These Gaps.....14

3 Objectives.....16

3.1 To Develop an Intelligent House Price Prediction System 16
3.2 To Provide an Interactive Real Estate Analytics Dashboard.....17
3.3 To Build a Personalized Property Recommendation System 18
3.4 To Implement Data-Driven Decision Support.....19
3.5 To Bridge the Gap Between Real Estate Data and Smart Analysis 20

4 Methodology 22

4.1 Overview of Development Approach.....22
4.2 Technology Stack 23
4.3 Data Collection and Preprocessing.....25
4.4 Feature Engineering and Data Analysis 27
4.5 Machine Learning Model Development.....28
4.6 Recommendation System Integration.....30
4.7 Data Visualization and Analytics Dashboard.....32

4.8 User Interface Development with Streamlit 33
4.9 Conclusion 35

5 System Design and Architecture 36
5.1 System Overview 36
5.2 High-Level Architecture Diagram 37
5.3 Modules and Their Interactions 39

6 Implementation 43
6.1 Data Collection and Backend Processing 43
6.2 Dataset and Model Management 47
6.2.1 Housing Dataset Management 48
6.2.2 Trained Model Storage and Management 51
6.3 Dataset Structure and Feature Organization 54
6.4 Machine Learning Model Architecture 58
6.5 System Workflow and Data Flow Diagram (DFD) 63
6.6 Model Testing and Performance Evaluation 68
6.7 Recommendation System Implementation 73
6.8 Visualization and Analytics Integration 79
6.9 Sample Code Snippets and Implementation Examples 85

7 System Specifications 92
7.1 Development Stack 93
7.2 Operating Systems 95
7.3 Development Tools & IDEs 97
7.4 Development Environment 100

8 Results 104
8.1 Functional Validation 104
8.2 User Experience and Interface 105
8.3 AI Integration and Performance 106
8.4 System Stability and Deployment 107
8.5 Early Adoption and Feedback 108
8.6 Scalability and Extensibility 109

9 Conclusion 110

10 Future Scope 113
9.1 Integration with Advanced Machine Learning Models 113
9.2 Scalability and Distributed Architecture 118

References.....124

LIST OF FIGURES

FIGURE NO. TITLE **PAGE NO.**

Fig 1.1 Conceptual Overview of Gurgaon Real Estate Intelligence System 2

Fig 5.2.1 High Level Architecture of the System 38

Fig 8.1 Home Page of the Web-Based Application.....104

Fig 8.2 House Price Prediction Interface 105

Fig 8.3 Analytics Insights Dashboard.....106

Fig 8.4 Distance and Location Based Recommendation – Apartments.....107

1 Introduction

1.1 Background of the Problem

The real estate industry is growing rapidly, and property prices are changing continuously based on factors such as location, area, number of rooms, amenities, market demand, and infrastructure development. Buyers and investors often face difficulty in identifying the correct price of a property because traditional methods mainly depend on manual analysis and market assumptions.

Many people spend a significant amount of time comparing properties, checking prices, and analyzing different locations before making a decision. Inaccurate pricing and lack of proper market insights can lead to financial loss and poor investment decisions.

With the growth of data and Machine Learning technologies, it has become possible to analyze large amounts of real estate data and predict house prices more accurately. Machine Learning models can identify hidden patterns and relationships between property features and prices, helping users make data-driven decisions.

The need for an automated system that can predict house prices and recommend similar properties motivated the development of this project. This system helps users save time, understand market trends, and make better real estate decisions through prediction, visualization, and recommendation features.

Fig 1.1: Conceptual Overview of Gurgaon Real Estate Intelligence System

1.2 Motivation for the Project

The main motivation behind developing the **Gurgaon Real Estate Intelligence System Using Random Forest and Distance - Location Based Recommendation** is to solve the difficulties faced by people while searching for suitable properties and understanding real estate prices. Property buyers and investors often find it challenging to analyze market trends, compare multiple properties, and identify the correct price of a house.

Traditional methods of property evaluation are time-consuming and mostly depend on manual research, broker suggestions, and market assumptions, which may not always provide accurate results. This created the need for a smart and automated system that can provide reliable price predictions and property recommendations using data-driven techniques.

The project was also motivated by the growing importance of Machine Learning and Data Analytics in solving real-world problems. Developing this project provided an opportunity to apply practical knowledge of Python, Machine Learning, Data Visualization, and Streamlit in a real estate application.

Another motivation for this project was to build a user-friendly system that can help users make better property-related decisions by providing predictive analysis, visualization dashboards, and recommendation features in a simple and interactive way.

1.3 Scope of the Project

The scope of the **Gurgaon Real Estate Intelligence System Using Random Forest and Distance - Location Based Recommendation** is focused on predicting property prices and providing real estate insights using Machine Learning and Data Analytics techniques. The project is designed to help users analyze housing data, understand market trends, and make better property-related decisions.

The system can be used by property buyers, sellers, investors, and real estate analysts to estimate house prices based on features such as location, area, number of bedrooms, bathrooms, and other property details. It also provides recommendations for similar properties using similarity-based techniques.

The project includes multiple functionalities such as:

- House price prediction using Machine Learning models
- Property recommendation system

- Interactive data visualization and analytics
- Location-based price analysis
- User-friendly web application using Streamlit

The project mainly focuses on housing data from Gurgaon and nearby areas, but the system can be extended in the future to support data from multiple cities and regions.

In the future, the project scope can be expanded by integrating live real estate APIs, advanced Deep Learning models, cloud deployment, and mobile application support for real-time property analysis and prediction.

1.4 Objectives

The main objectives of the **Gurgaon Real Estate Intelligence System Using Random Forest and Distance - Location Based Recommendation** are as follows:

1. To develop a Machine Learning model that can accurately predict house prices based on different property features.
2. To build an interactive and user-friendly web application using Streamlit for easy access and usability.
3. To analyze and preprocess real estate data for improving prediction performance and data quality.
4. To provide a property recommendation system that suggests similar properties based on user preferences and property characteristics.
5. To visualize housing market trends and insights using charts, graphs, and maps for better understanding of the data.
6. To help buyers, sellers, and investors make better property-related decisions using data-driven analysis.
7. To gain practical experience in Machine Learning, Data Analytics, Streamlit, and real-world project development.

1.5 Problem Statement

In the real estate market, estimating the correct price of a property is a challenging task because property prices depend on multiple factors such as location, area, number of

rooms, amenities, infrastructure, and market demand. Buyers and investors often rely on manual research, broker opinions, and market assumptions, which may lead to inaccurate pricing and poor investment decisions.

Traditional property analysis methods are time-consuming and do not provide efficient comparison or recommendation features for users. In addition, users face difficulty in understanding housing trends and identifying properties that match their requirements.

Therefore, there is a need for an intelligent and automated system that can analyze real estate data, predict house prices accurately, and recommend similar properties based on user preferences. The system should also provide visualization and analytics features to help users better understand market trends and make informed real estate decisions.

2. Literature Review

2.1 Related Research and Existing Platforms

House price prediction has become an important research area in the fields of Machine Learning, Data Science, and Artificial Intelligence. Many researchers and organizations have developed systems and models to estimate property prices using historical real estate data and predictive analytics techniques.

Several studies have shown that Machine Learning algorithms such as Linear Regression, Decision Tree, Random Forest, XGBoost, and Support Vector Regression can provide accurate house price predictions by analyzing factors such as location, area, number of bedrooms, amenities, and market trends. These research works focus on improving prediction accuracy and helping users make better real estate decisions.

Different online real estate platforms also provide property listings, market analysis, and recommendation systems. Some popular existing platforms include:

[1] MagicBricks – Provides property buying, selling, renting, and market price analysis services.

[2] 99acres – Offers property listings, price trends, and location-based recommendations.

[3] Housing.com – Provides property search, rental listings, and housing analytics features.

[4] NoBroker – Helps users buy, rent, and sell properties without broker involvement.

[5] Zillow – Uses predictive models and data analytics for property estimation and market analysis.

Although these platforms provide property-related services, many systems mainly focus on property listings and basic price estimation. The proposed project aims to combine house price prediction, recommendation systems, and data visualization into a single interactive platform using Machine Learning techniques.

The project also focuses on improving user understanding through graphical analytics, location-based insights, and property similarity recommendations, making it more useful for buyers, investors, and real estate analysts.

2.1.1 Professional Networking Platforms

Professional networking platforms play an important role in connecting students, developers, researchers, and industry professionals. These platforms help users share

knowledge, explore job opportunities, collaborate on projects, and stay updated with the latest technological advancements in fields such as Machine Learning, Data Science, and Artificial Intelligence.

For this project, professional networking platforms were useful for learning new concepts, understanding industry practices, and exploring real-world implementations of Machine Learning applications in the real estate domain. These platforms also provide opportunities to showcase projects, build professional profiles, and connect with experts.

Some popular professional networking platforms include:

1. LinkedIn – Used for connecting with industry professionals, recruiters, and organizations. It also provides learning resources and job opportunities.
2. GitHub – A platform for code hosting, project collaboration, and version control.
3. Kaggle – Provides datasets, competitions, and collaborative learning resources for Machine Learning and Data Science projects.
4. Stack Overflow – A community platform where developers ask and answer programming and technical questions.
5. ResearchGate – Used for accessing research papers and academic publications.

These platforms helped in gaining technical knowledge, solving development challenges, and understanding current industry trends related to Machine Learning and real estate analytics.

2.1.2 Academic Collaboration Platforms

Academic collaboration platforms are widely used by students, researchers, and educational institutions for sharing knowledge, conducting research, accessing study materials, and collaborating on academic projects. These platforms support learning, communication, and research activities by providing access to journals, research papers, datasets, and collaborative tools.

During the development of this project, academic collaboration platforms were helpful in understanding Machine Learning concepts, exploring research work related to house price prediction, and accessing educational resources for data analysis and model development. These platforms also helped in improving problem-solving skills and gaining practical knowledge related to Artificial Intelligence and Data Science.

Some commonly used academic collaboration platforms include:

1. Google Scholar – Provides access to research papers, journals, theses, and academic articles.
2. ResearchGate – Helps researchers and students share research work and publications.
3. Kaggle – Offers datasets, notebooks, competitions, and learning resources.
4. Coursera – Provides courses and certifications related to Machine Learning and Artificial Intelligence.
5. Google Colab – Used for writing and executing Python code for Data Science and Machine Learning tasks.
6. IEEE Xplore – Provides access to technical research papers and publications in engineering and technology domains.

These platforms contributed significantly to the successful completion of the project by providing technical guidance, research references, datasets, and collaborative learning opportunities.

2.1.3 Research Papers Related to House Price Prediction

Research papers and academic studies have played an important role in the development of intelligent house price prediction systems. Many researchers have used Machine Learning and Data Analytics techniques to improve prediction accuracy and real estate decision-making. These studies helped in understanding different prediction models, feature engineering techniques, recommendation approaches, and performance evaluation methods used in the real estate domain.

Research Paper 1

Title

House Price Prediction Using Machine Learning Algorithms

Authors

- Rounak Banik
- Saptarshi Ghosh
- Aniket Roy
- Debojyoti Ghosh

Summary of the Research Paper

This research paper focuses on predicting house prices using different Machine Learning algorithms such as Linear Regression, Decision Tree Regression, and Random Forest Regression. The study analyzes various property features including location, area size, number of rooms, and amenities to estimate property prices accurately.

The researchers performed data preprocessing, feature selection, and model evaluation to compare the performance of different algorithms. The study concluded that ensemble learning models such as Random Forest provided better prediction accuracy compared to traditional regression models.

The paper also highlighted the importance of data quality and feature engineering in improving Machine Learning model performance for real estate analytics.

Limitations of the Research Paper

- Limited dataset size
- No real-time market integration
- Recommendation systems were not included
- Lack of visualization dashboards
- Limited geographic analysis features

Research Paper 2

Title

Real Estate Price Prediction Using Machine Learning Techniques

Authors

- S. Kokila
- Dr. S. Sujatha

Summary of the Research Paper

This research paper presents a Machine Learning-based approach for predicting real estate prices using regression algorithms and data analysis techniques. The study used housing datasets containing information such as property size, location, furnishing status, and nearby facilities to train prediction models.

Different Machine Learning algorithms including Linear Regression, Support Vector Regression, and Decision Tree Regression were evaluated based on prediction accuracy and error metrics. The study emphasized the role of predictive analytics in helping buyers and investors make better property decisions.

The research also discussed the importance of preprocessing and handling missing values to improve model reliability.

Limitations of the Research Paper

- No advanced recommendation system
- Limited scalability
- Absence of real-time analytics
- No interactive dashboards
- Lack of deployment and frontend integration

2.2 Gaps and Problems in Existing Systems

Although many real estate platforms and property analysis systems are available today, several limitations and challenges still exist in these systems. Most existing platforms mainly focus on property listings and advertisements rather than providing accurate predictive analysis and intelligent recommendations.

One of the major problems in existing systems is the lack of accurate house price prediction. Many platforms display estimated prices based only on basic market trends and do not use advanced Machine Learning techniques to analyze multiple property features effectively. This can lead to inaccurate pricing and confusion for buyers and investors.

Another limitation is the absence of personalized recommendation systems. Most platforms provide general property listings but fail to recommend similar or suitable properties according to user preferences, budget, location, and property characteristics.

Existing systems also have limited visualization and analytics features. Users often find it difficult to understand market trends, price variations, and location-based insights because the data is not presented in an interactive and user-friendly manner.

Some platforms also face issues such as:

- Dependency on manual data updates
- Lack of real-time analytics
- Complex user interfaces
- Incomplete or inconsistent property data
- Limited transparency in pricing methods

In addition, many systems are designed only for buying and selling purposes and do not provide educational insights or analytical dashboards for users who want to study market behavior and investment opportunities.

The proposed Gurgaon Real Estate Intelligence System Using Random Forest And Distance - Location Based Recommendation aims to address these gaps by integrating Machine Learning-based price prediction, intelligent recommendation systems, interactive visualizations, and user-friendly analytics into a single platform. This helps users make more informed and data-driven real estate decisions.

2.3 How Connect I Addresses These Gaps

The proposed system, **Connect I – Gurgaon Real Estate Intelligence System Using Random Forest and Distance - Location Based Recommendation**, is designed to overcome the limitations and challenges found in existing real estate platforms. The system combines Machine Learning, Data Analytics, and interactive visualization techniques to provide a smarter and more user-friendly solution for property analysis and prediction.

One of the major gaps in existing systems is inaccurate price estimation. Connect I addresses this problem by using Machine Learning algorithms that analyze multiple property features such as location, area, number of bedrooms, bathrooms, and amenities to generate more reliable house price predictions.

The system also solves the issue of limited recommendation features by implementing a property recommendation module. This module suggests similar properties based on user preferences and property characteristics, helping users explore better options easily.

To improve user understanding, Connect I provides interactive dashboards, charts, and graphical visualizations that display market trends, price distributions, and location-based analysis. These visual insights help users make informed and data-driven decisions.

Unlike traditional systems that mainly focus on property listings, Connect I integrates multiple functionalities into a single platform, including:

- House price prediction
- Property recommendation system
- Data visualization and analytics
- User-friendly web interface
- Location-based market analysis

The system also improves accessibility and usability through an interactive Streamlit-based web application, making it simple for users to input data and view predictions instantly.

By combining predictive analytics, recommendation systems, and visualization features, Connect I provides a more intelligent, transparent, and efficient solution compared to many existing real estate platforms.

3 Objectives

3.1 To Develop an Intelligent House Price Prediction System

The primary objective of this project is to develop an intelligent and efficient house price prediction system using Machine Learning techniques. The system is designed to analyze various property-related factors such as location, area, number of bedrooms, bathrooms, furnishing status, and amenities to predict the estimated price of a house accurately.

Traditional methods of property valuation often depend on manual calculations, market assumptions, and broker estimates, which may not always provide reliable results. To overcome these limitations, this project uses data-driven analysis and predictive modeling to generate more accurate and consistent price estimations.

The intelligent prediction system helps users make informed decisions while buying, selling, or investing in properties. By using Machine Learning algorithms and real estate datasets, the system can identify patterns and relationships between different housing features and market prices.

This objective also focuses on improving automation, reducing human effort, and providing users with a fast, reliable, and user-friendly platform for real estate price analysis and prediction.

3.2 To Provide an Interactive Real Estate Analytics Dashboard

The objective of this module is to provide an interactive and user-friendly real estate analytics dashboard that helps users understand housing market trends and property-related insights through graphical visualization and analytical reports.

The dashboard is designed to display important information such as price distribution, sector-wise analysis, location-based trends, property comparisons, and market statistics using charts, graphs, maps, and visual representations. These visual insights make complex real estate data easier to understand and analyze.

Traditional real estate platforms often provide only basic property information without proper analytical support. This project addresses that limitation by integrating data visualization techniques that allow users to explore and interpret housing data more effectively.

The analytics dashboard also helps buyers, sellers, and investors identify market patterns, compare property prices across different locations, and make better real estate decisions based on data-driven insights.

By combining interactive visualization tools with Machine Learning-based analysis, the system improves user experience and provides a smarter and more informative approach to real estate analytics.

3.3 To Build a Personalized Property Recommendation System

The objective of this module is to develop a personalized property recommendation system that helps users discover properties similar to their preferences and requirements. The recommendation system is designed to improve user experience by suggesting relevant housing options based on property features, location, budget, amenities, and similarity analysis.

In many existing real estate platforms, users need to manually search and compare multiple properties, which can be time-consuming and confusing. This project solves that problem by implementing an intelligent recommendation mechanism that automatically identifies and suggests similar properties to the user.

The recommendation system uses data analysis and similarity-based techniques to compare different property attributes and generate meaningful recommendations. This helps users explore better options without spending excessive time searching through large property listings.

The module also supports better decision-making for buyers and investors by providing alternative property suggestions that match their interests and budget. By integrating recommendation features into the platform, the system creates a smarter, more personalized, and efficient real estate experience for users.

3.4 To Implement Data-Driven Decision Support

The objective of this module is to implement a data-driven decision support system that helps users make informed and accurate real estate decisions using analytical insights and Machine Learning predictions. The system is designed to reduce dependency on manual assumptions and provide reliable results based on housing data analysis.

In the real estate market, buyers, sellers, and investors often face difficulties in evaluating property prices and understanding market trends. Traditional decision-making methods may lead to inaccurate pricing and poor investment choices due to lack of proper analysis.

To overcome these challenges, the project uses Machine Learning algorithms and data analytics techniques to process real estate data and generate meaningful insights. The system analyzes factors such as location, area, amenities, and market patterns to support better property evaluation and prediction.

The data-driven approach also improves transparency and accuracy by presenting analytical reports, visual dashboards, and predictive outputs that help users compare properties and understand market behavior effectively.

By implementing intelligent analytical support, the project enables users to make smarter, faster, and more confident property-related decisions.

3.5 To Bridge the Gap Between Real Estate Data and Smart Analysis

The objective of this module is to bridge the gap between raw real estate data and meaningful smart analysis by transforming complex housing information into understandable and actionable insights. The project focuses on converting large amounts of property data into useful predictions, recommendations, and visual analytics using Machine Learning and Data Analysis techniques.

In traditional real estate systems, data is often available in scattered or unstructured formats, making it difficult for users to interpret market trends and property values effectively. Many users struggle to understand pricing patterns, location-based variations, and investment opportunities due to the lack of analytical support.

This project addresses these challenges by integrating intelligent data processing, predictive modeling, and visualization techniques into a single platform. The system analyzes housing data, identifies important patterns, and presents the information through charts, graphs, dashboards, and predictive outputs.

The smart analysis features help buyers, sellers, and investors understand real estate trends more clearly and make better property-related decisions based on data-driven insights rather than assumptions.

By combining Machine Learning with real estate analytics, the project creates a more intelligent, transparent, and efficient system that connects housing data with practical decision-making and market understanding.

4 Methodology

4.1 Overview of Development Approach

The development of the **Gurgaon Real Estate Intelligence System Using Random Forest and Distance - Location Based Recommendation** follows a structured and data-driven approach based on Machine Learning, Data Analytics, and Web Application Development techniques. The main goal of the development process is to create an intelligent, accurate, and user-friendly system for predicting house prices and recommending suitable properties.

The project begins with the collection of real estate data from available datasets containing information such as property location, area, number of bedrooms, bathrooms, amenities, and price details. After data collection, preprocessing techniques are applied to clean the dataset, handle missing values, remove inconsistencies, and prepare the data for analysis and model training.

Once the data is prepared, Exploratory Data Analysis (EDA) and feature engineering techniques are performed to identify important patterns, trends, and relationships between different housing features and property prices. Visualization tools such as graphs, charts, and maps are used to better understand the dataset and market behavior.

The next stage involves training Machine Learning models using processed housing data. Different algorithms are evaluated to select the most suitable model for accurate house price prediction. The trained model is then saved and integrated into the application.

To improve user experience, a recommendation system is also implemented to suggest similar properties based on user preferences and property characteristics. Additionally, an interactive analytics dashboard is developed to display market insights and real estate trends visually.

The entire system is developed as a web application using Streamlit, which provides a simple and interactive interface for users to input property details, view predictions, explore analytics, and receive recommendations.

Overall, the development approach combines data preprocessing, Machine Learning, recommendation systems, visualization techniques, and web development to create a complete and efficient real estate analysis platform.

4.2 Technology Stack

The **Gurgaon Real Estate Intelligence System Using Random Forest and Distance - Location Based Recommendation** is developed using a combination of programming languages, Machine Learning libraries, data analysis tools, and web development

frameworks. The selected technology stack helps in building an efficient, interactive, and scalable real estate analytics platform.

The major technologies used in the project are described below:

1. Python

Python is the primary programming language used for the development of the project. It is widely used in Machine Learning, Data Science, and web application development because of its simplicity and powerful libraries.

2. Pandas

pandas is used for data manipulation and analysis. It helps in handling datasets, cleaning data, preprocessing, and performing analytical operations efficiently.

3. NumPy

NumPy is used for numerical computations and array operations. It provides support for mathematical and statistical calculations required during data analysis and model development.

4. Scikit-learn

Scikit-learn is the main Machine Learning library used for training, testing, and evaluating prediction models. It provides algorithms and tools for regression, preprocessing, and model evaluation.

5. Streamlit

Streamlit is used to develop the interactive web application interface. It allows users to interact with the prediction system, analytics dashboard, and recommendation modules easily.

6. Matplotlib and Seaborn

Matplotlib and Seaborn are used for data visualization and graphical representation of housing trends, market analysis, and statistical insights.

7. Plotly

Plotly is used to create interactive charts, graphs, and dashboards for better user experience and analytical understanding.

8. Pickle

Python Pickle is used for saving and loading trained Machine Learning models. It helps in integrating the trained prediction model into the web application for real-time prediction.

9. Jupyter Notebook

Jupyter Notebook is used for data analysis, experimentation, visualization, and model development during the project implementation phase.

The combination of these technologies helps in building a reliable, scalable, and efficient system for house price prediction, recommendation, and real estate analytics.

4.3 Data Collection and Preprocessing

Data collection and preprocessing are important stages in the development of the **Gurgaon Real Estate Intelligence System Using Random Forest and Distance - Location Based Recommendation**. The quality and accuracy of the dataset directly affect the performance of the Machine Learning model and the reliability of the prediction results.

The project uses housing and real estate datasets containing information related to property prices, locations, area, number of bedrooms, bathrooms, balconies, amenities, and other important property features. The collected data is analyzed and prepared before being used for model training and prediction.

During the preprocessing stage, several data cleaning and transformation techniques are applied to improve data quality and consistency. The main preprocessing steps include:

1. Data Cleaning

Unnecessary columns, duplicate records, and inconsistent values are removed from the dataset to improve accuracy and reduce errors during analysis.

2. Handling Missing Values

Missing or null values in the dataset are identified and treated using suitable methods such as replacement, imputation, or removal of incomplete records.

3. Feature Selection

Important property features that significantly affect house prices are selected for model training. This helps improve prediction performance and reduces unnecessary complexity.

4. Encoding Categorical Data

Categorical features such as property location and furnishing status are converted into numerical formats so that they can be processed by Machine Learning algorithms.

5. Outlier Detection and Removal

Extreme or abnormal values that may negatively impact prediction accuracy are identified and handled appropriately.

6. Data Transformation and Scaling

Numerical features are normalized or scaled when required to improve model performance and ensure consistency in data representation.

After preprocessing, the cleaned and structured dataset becomes ready for Exploratory Data Analysis (EDA), feature engineering, model training, and prediction tasks. Proper preprocessing helps improve the efficiency, accuracy, and reliability of the overall system.

4.4 Feature Engineering and Data Analysis

Feature engineering and data analysis are essential stages in the development of the **Gurgaon Real Estate Intelligence System Using Random Forest and Distance - Location Based Recommendation**. These processes help in improving the quality of the dataset, identifying important patterns, and increasing the accuracy of the Machine Learning model.

Feature engineering involves selecting, modifying, and creating meaningful features from raw housing data so that the prediction model can better understand the relationship between property attributes and house prices. Important features such as location, area, number of bedrooms, bathrooms, balconies, furnishing status, and amenities are analyzed to determine their impact on property pricing.

During this stage, unnecessary or less significant features are removed, while useful features are transformed into a suitable format for Machine Learning algorithms. Feature engineering helps reduce complexity and improve model efficiency and prediction performance.

Data analysis is performed to explore and understand the real estate dataset using statistical methods and visualization techniques. Exploratory Data Analysis (EDA) helps identify trends, relationships, correlations, and patterns in housing prices across different locations and property types.

Different visualization techniques are used in this project, including:

- Price distribution analysis
- Scatter plots for area and price comparison
- Sector-wise property analysis
- Correlation analysis between features
- Geographical and location-based visualization
- Histograms and bar charts for market trends

These analytical techniques help users and developers better understand market behavior and property pricing patterns. The insights generated through feature engineering and data analysis improve the accuracy, reliability, and effectiveness of the prediction and recommendation system.

4.5 Machine Learning Model Development

Machine Learning model development is one of the most important stages of the **Gurgaon Real Estate Intelligence System Using Random Forest and Distance - Location Based Recommendation**. The main objective of this stage is to build an accurate and reliable prediction model that can estimate house prices based on different property features and housing market data.

After completing data preprocessing and feature engineering, the prepared dataset is divided into training and testing datasets. The training dataset is used to train the Machine Learning model, while the testing dataset is used to evaluate the prediction performance and accuracy of the model.

Different Machine Learning algorithms are analyzed and tested to identify the most suitable model for house price prediction. Regression-based algorithms are mainly used because the project focuses on predicting continuous numerical values such as property prices.

The model development process includes the following steps:

1. Data Splitting

The dataset is divided into training and testing sets to evaluate the model properly and avoid overfitting.

2. Model Selection

Suitable Machine Learning algorithms are selected and tested for prediction performance. Different models are compared to identify the most accurate and efficient approach.

3. Model Training

The selected algorithm is trained using processed housing data and important property features.

4. Model Evaluation

Evaluation metrics such as Mean Absolute Error (MAE), Mean Squared Error (MSE), Root Mean Squared Error (RMSE), and R^2 Score are used to measure prediction accuracy and model performance.

5. Model Optimization

Hyperparameter tuning and performance improvement techniques are applied to improve prediction reliability and efficiency.

6. Model Saving and Integration

The final trained model is saved using Pickle and integrated into the Streamlit web application for real-time house price prediction.

The developed Machine Learning model helps users estimate property prices more accurately and supports data-driven real estate decision-making. This stage demonstrates the practical implementation of Machine Learning techniques in solving real-world real estate problems.

4.6 Recommendation System Integration

The recommendation system integration is an important component of the **Gurgaon Real Estate Intelligence System Using Random Forest and Distance- Location Based Recommendation**. The main objective of this module is to provide users with personalized property suggestions based on property characteristics, user preferences, and similarity analysis.

In traditional real estate platforms, users often need to manually search and compare multiple properties, which can be time-consuming and inefficient. To solve this problem, the project integrates an intelligent recommendation system that automatically identifies and suggests similar properties to users.

The recommendation module works by analyzing important property features such as location, area, number of bedrooms, amenities, furnishing status, and price range. Properties with similar characteristics are identified using similarity-based techniques and recommendation algorithms.

The recommendation system integration process includes the following stages:

1. Property Feature Analysis

The system analyzes property attributes and extracts important information required for generating recommendations.

2. Similarity Calculation

Similarity techniques such as cosine similarity are used to measure the similarity between different properties based on their features.

3. Recommendation Generation

The system generates and displays a list of properties that closely match the selected property or user preferences.

4. User Interaction

Users can explore recommended properties through the interactive web application and compare different housing options easily.

5. Integration with Streamlit Application

The recommendation system is integrated into the Streamlit-based web application to provide real-time property suggestions and improve user experience.

The recommendation module helps users discover relevant and suitable properties quickly, reducing manual effort and improving decision-making. By combining recommendation techniques with Machine Learning and data analytics, the system provides a smarter and more personalized real estate experience.

4.7 Data Visualization and Analytics Dashboard

The Data Visualization and Analytics Dashboard is an important module of the **Gurgaon Real Estate Intelligence System Using Random Forest and Distance - Location Based Recommendation**. The main objective of this module is to present complex real estate data in a simple, interactive, and visually understandable format.

In real estate analysis, users often face difficulty in understanding large datasets and identifying important market trends. To overcome this challenge, the project integrates visualization techniques and analytical dashboards that help users explore property data more effectively.

The dashboard provides graphical representations of housing market trends, property price distributions, location-based analysis, and comparative insights. Different visualization tools and libraries are used to create interactive charts, graphs, and maps that improve analytical understanding and user experience.

The analytics dashboard includes the following features:

1. Price Distribution Analysis

Displays the distribution of house prices across different locations and property types using histograms and charts.

2. Location-Based Visualization

Provides geographical and sector-wise analysis of properties to help users understand regional price trends and market behavior.

3. Comparative Property Analysis

Allows users to compare property prices, area, and amenities using scatter plots and analytical graphs.

4. Market Trend Visualization

Shows trends and patterns in the real estate market through bar charts, line graphs, and statistical summaries.

5. Interactive Dashboard Features

Interactive visual components allow users to filter, explore, and analyze housing data dynamically through the Streamlit application.

Visualization libraries such as Matplotlib, Seaborn, and Plotly are used to create these analytical dashboards and visual reports.

The dashboard helps buyers, sellers, investors, and analysts better understand housing market conditions and make data-driven real estate decisions more effectively.

4.8 User Interface Development with Streamlit

The user interface of the **Gurgaon Real Estate Intelligence System Using Random Forest and Distance - Location Based Recommendation** is developed using Streamlit to provide an interactive, simple, and user-friendly experience for users. Streamlit is a powerful Python framework that allows rapid development of web applications for Machine Learning and Data Science projects.

The main objective of this module is to create an easy-to-use platform where users can interact with the prediction system, analytics dashboard, and recommendation modules without requiring technical knowledge. The Streamlit-based interface helps users enter property details, view predictions, analyze housing trends, and explore recommended properties efficiently.

The user interface development process includes the following components:

1. Interactive Input Forms

The application provides input fields, dropdown menus, sliders, and selection options for users to enter property details such as location, area, number of bedrooms, bathrooms, and amenities.

2. Real-Time House Price Prediction

After entering property details, the system processes the input data and displays the predicted house price instantly using the trained Machine Learning model.

3. Recommendation System Interface

The interface allows users to explore similar property recommendations generated by the recommendation module.

4. Analytics Dashboard Integration

Interactive charts, graphs, maps, and visual reports are integrated into the application to provide real estate insights and market analysis.

5. Responsive and User-Friendly Design

The Streamlit application is designed to be simple, responsive, and easy to navigate, improving accessibility and user experience.

6. Integration with Machine Learning Models

The trained prediction model and recommendation system are integrated with the Streamlit interface to enable seamless interaction between the backend and frontend components.

The use of Streamlit significantly simplifies web application development and provides an effective platform for deploying Machine Learning solutions in real-world scenarios. The interactive interface enhances usability and makes the system more practical and accessible for users interested in real estate analysis and house price prediction.

4.9 Conclusion

The methodology used in the **Gurgaon Real Estate Intelligence System Using Random Forest and Distance - Location Based Recommendation** successfully combines Machine Learning, Data Analytics, Visualization, and Web Application Development techniques to create an intelligent and user-friendly real estate analysis platform.

The development process begins with data collection and preprocessing, followed by feature engineering, exploratory data analysis, and Machine Learning model development to ensure accurate house price prediction. The integration of a recommendation system further improves user experience by suggesting similar properties based on property characteristics and user preferences.

Interactive dashboards and visualization techniques help users understand housing market trends and real estate insights more effectively. In addition, the Streamlit-based web application provides a simple and accessible interface for users to interact with the system easily.

The methodology adopted in this project ensures accuracy, efficiency, scalability, and practical usability. Overall, the project demonstrates how Machine Learning and Data Analytics can be applied to solve real-world problems in the real estate domain and support better property-related decision-making.

5 System Design and Architecture

5.1 System Overview

The **Gurgaon Real Estate Intelligence System Using Random Forest and Distance - Location Based Recommendation** is an intelligent web-based application developed to assist users in analyzing real estate data, predicting house prices, and receiving personalized property recommendations. The system combines Machine Learning, Data Analytics, and Visualization techniques to provide a smart and interactive real estate analysis platform.

The main purpose of the system is to help buyers, sellers, and investors make informed property-related decisions using data-driven insights instead of relying only on manual research and market assumptions. The application predicts property prices based on important features such as location, area, number of bedrooms, bathrooms, furnishing status, and amenities.

The system architecture consists of multiple interconnected modules that work together efficiently. These modules include data preprocessing, feature engineering, Machine Learning model development, recommendation system integration, visualization dashboards, and user interface components. Each module performs a specific task and contributes to the overall functionality of the application.

Users interact with the system through an interactive web application developed using Streamlit. The interface allows users to enter property details, view predicted house prices, explore recommended properties, and analyze market trends through visual dashboards and analytical reports.

The backend of the system handles data processing, model prediction, recommendation generation, and visualization operations. Machine Learning models trained on real estate datasets are used to generate accurate and reliable price predictions in real time.

Overall, the system provides an integrated platform for house price prediction, property recommendation, and real estate analytics, making the property evaluation process smarter, faster, and more efficient.

5.2 High-Level Architecture Diagram

The high-level architecture of the **Gurgaon Real Estate Intelligence System Using Random Forest and Distance - Location Based Recommendation** represents the overall structure and interaction between different modules of the system. The architecture is designed to ensure smooth data flow, efficient processing, accurate prediction, and interactive user experience.

The system follows a modular architecture where each component performs a specific function and communicates with other modules to provide complete real estate analysis and prediction functionality.

The major components of the architecture are described below:

1. User Interface Layer

The frontend of the application is developed using Streamlit. This layer allows users to interact with the system by entering property details, viewing predictions, exploring recommendations, and analyzing dashboards.

2. Data Collection and Preprocessing Layer

This layer handles dataset loading, cleaning, preprocessing, feature selection, encoding, and transformation. It prepares the housing data for Machine Learning model training and prediction.

3. Machine Learning Prediction Layer

This module contains trained Machine Learning models responsible for predicting house prices based on user inputs and property features.

4. Recommendation System Layer

The recommendation module analyzes property similarity and generates personalized property suggestions for users.

5. Visualization and Analytics Layer

This layer generates charts, graphs, maps, and dashboards to display market trends, sector-wise analysis, and housing insights visually.

6. Dataset and Model Storage Layer

This layer stores processed datasets, trained Machine Learning models, and recommendation data required for prediction and analytics operations.

7. Output and Result Layer

The final prediction results, recommended properties, and analytical visualizations are displayed to users through the interactive web interface.

The architecture ensures scalability, modularity, and efficient communication between frontend and backend components, making the system reliable and easy to maintain.

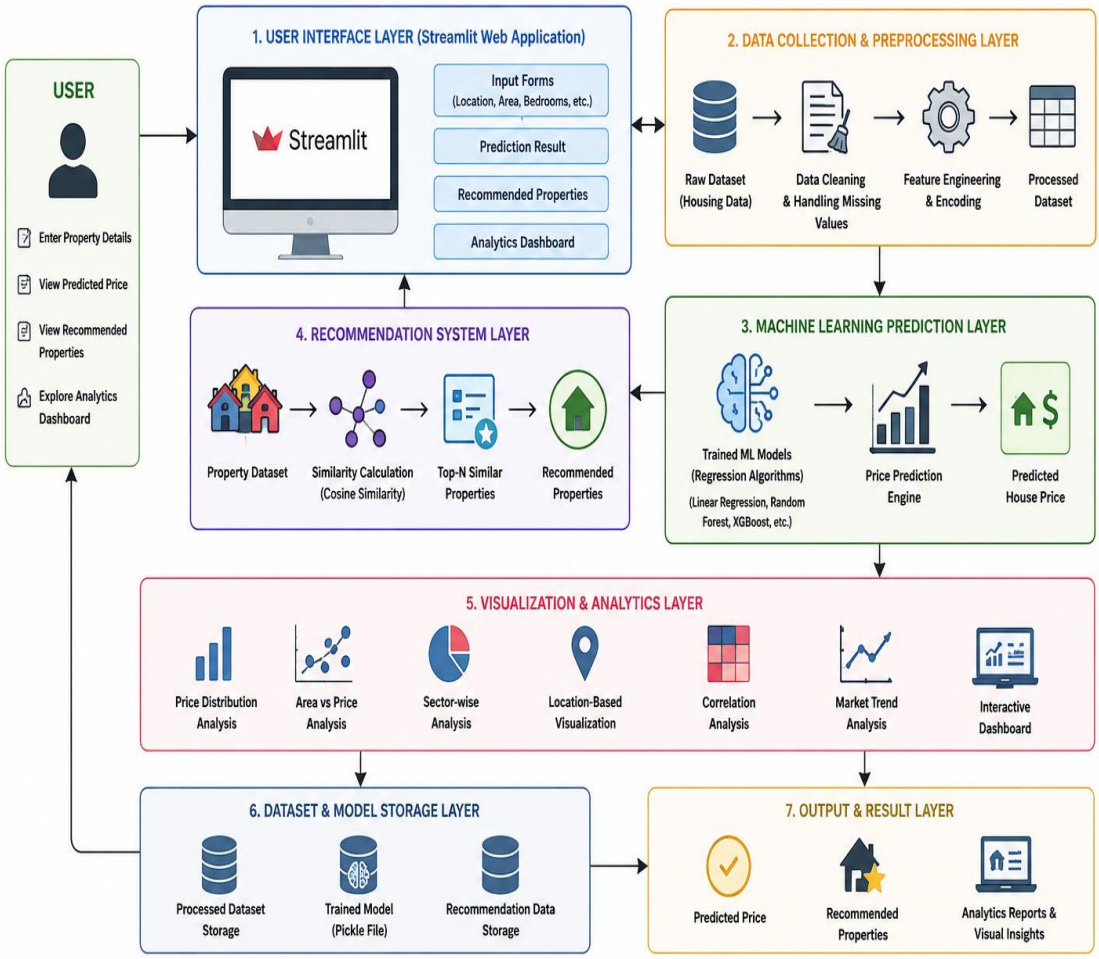

Fig 5.2.1 : HIGH LEVEL ARCHITECTURE

5.3 Modules and Their Interactions

The **Gurgaon Real Estate Intelligence System Using Random Forest and Distance - Location Based Recommendation** is designed using a modular architecture where different modules work together to provide efficient house price prediction, property recommendation, and real estate analytics services. Each module performs a specific function and interacts with other modules to ensure smooth system operation and accurate results.

The interaction between modules helps in maintaining scalability, efficiency, and organized data flow throughout the application. The major modules and their interactions are described below:

1. Data Collection and Preprocessing Module

This module is responsible for collecting, cleaning, and preparing housing datasets for analysis and prediction. It handles missing values, duplicate records, feature encoding, and data transformation processes.

The processed data generated by this module is forwarded to the Machine Learning prediction module, recommendation system, and analytics dashboard for further processing and analysis.

2. Machine Learning Prediction Module

This module uses trained Machine Learning models to predict house prices based on property features such as location, area, bedrooms, bathrooms, and amenities.

The prediction module receives processed data from the preprocessing module and generates real-time prediction results. These results are then displayed to users through the Streamlit web application.

The module also interacts with the visualization dashboard to display prediction-related analytics and trends.

3. Property Recommendation Module

The recommendation module provides personalized property suggestions based on similarity analysis and user preferences.

It interacts with the dataset storage and prediction module to identify properties with similar characteristics. The recommended properties are then displayed to users through the user interface module.

This interaction improves user experience by helping users discover relevant housing options quickly and efficiently.

4. Data Visualization and Analytics Module

This module is responsible for generating charts, graphs, dashboards, and visual reports to help users understand market trends and housing insights.

The analytics module receives processed data and prediction outputs from other modules and converts them into interactive visual representations such as:

- Price distribution charts
- Area vs price analysis
- Sector-wise comparison
- Correlation analysis
- Location-based visualization

The generated analytics are displayed through the Streamlit dashboard for user interaction and exploration.

5. User Interface Module

The user interface module is developed using Streamlit and acts as the communication layer between users and backend modules.

This module allows users to:

- Enter property details
- View predicted house prices
- Explore recommended properties
- Analyze dashboards and visual reports

The interface collects user inputs and sends them to the backend prediction and recommendation modules for processing.

6. Dataset and Model Storage Module

This module stores processed datasets, trained Machine Learning models, recommendation data, and related resources required for system operation.

It supports other modules by providing access to trained models and processed housing data whenever prediction or recommendation tasks are performed.

6 Implementation

6.1 Data Collection and Backend Processing

Data collection and backend processing form the foundation of the **Gurgaon Real Estate Intelligence System Using Random Forest and Distance - Location Based Recommendation.** These processes are responsible for gathering housing data, preparing it for analysis, and handling all backend operations required for house price prediction, property recommendation, and real estate analytics. Proper data processing ensures that the Machine Learning model works efficiently and generates accurate results.

The backend processing layer acts as the core engine of the system, where data transformation, feature extraction, prediction logic, recommendation generation, and analytical computations are performed before displaying results to users through the Streamlit interface.

1. Data Collection

The first stage of the system involves collecting real estate and housing datasets containing information related to properties in Gurgaon. The collected dataset includes multiple property attributes that influence house prices and recommendation quality.

The dataset contains features such as:

- Property location
- Sector and area details
- Number of bedrooms and bathrooms
- Balconies and furnishing status
- Property type
- Area size (square feet)
- Amenities and facilities
- Price information

The collected data is stored in structured tabular format using CSV or Excel files, which are later loaded into the Python environment for processing and analysis.

2. Data Loading and Dataset Management

The collected housing dataset is loaded into the system using Python libraries such as pandas.

The backend system reads the dataset and converts it into dataframes for easier manipulation and analysis. Dataset management includes organizing columns, verifying data types, and preparing the data structure for preprocessing operations.

Example operations performed during dataset management include:

- Reading CSV files
- Checking dataset shape and dimensions
- Identifying feature names
- Verifying null values
- Inspecting data types

This stage ensures that the dataset is correctly structured before moving to preprocessing and analysis.

3. Data Cleaning and Preprocessing

Raw housing data often contains missing values, duplicate entries, inconsistent formats, and unnecessary information that may reduce prediction accuracy. Therefore, preprocessing is performed to improve data quality and reliability.

Major preprocessing operations include:

a) Handling Missing Values

Missing or null values are identified and treated using methods such as:

- Replacing missing values with mean or median values
- Filling categorical null values with mode
- Removing incomplete records when necessary

b) Removing Duplicate Records

Duplicate property entries are removed to avoid repeated data and incorrect model learning.

c) Feature Selection

Only important property features that significantly affect house prices are selected for model training and prediction.

d) Encoding Categorical Variables

Categorical features such as location, furnishing type, and property category are converted into numerical form using encoding techniques so that Machine Learning algorithms can process them.

e) Outlier Detection and Removal

Extreme or abnormal property prices and area values are identified and removed to improve prediction accuracy and reduce noise in the dataset.

f) Data Transformation and Scaling

Numerical features may be normalized or scaled to maintain consistency and improve model performance.

4. Backend Processing Architecture

The backend layer is developed using Python and handles all logical and computational operations of the system. The backend processing module acts as a bridge between the frontend interface and Machine Learning components.

The backend performs the following operations:

- Accepting user inputs from Streamlit interface
- Processing and formatting input data
- Passing processed data to prediction models
- Generating house price predictions
- Running recommendation algorithms
- Producing analytical visualizations
- Returning final results to the frontend dashboard

The backend ensures smooth communication between all modules and manages real-time system functionality efficiently.

5. Feature Engineering

Feature engineering is performed during backend processing to improve the quality of input data provided to Machine Learning models.

New meaningful features may be created from existing data to improve prediction performance. Important relationships between property attributes and pricing patterns are analyzed during this stage.

Feature engineering helps:

- Improve model accuracy
- Reduce unnecessary complexity
- Enhance analytical insights
- Optimize recommendation quality

6. Integration with Machine Learning Models

After preprocessing and feature engineering, the cleaned dataset is forwarded to the Machine Learning module for training and prediction.

The backend processing layer loads trained Machine Learning models stored using Pickle files and performs real-time predictions based on user input.

The prediction workflow includes:

1. Receiving property details from users
2. Processing input data
3. Converting input into model-compatible format
4. Passing data to trained models
5. Generating predicted house price
6. Displaying results through Streamlit interface

7. Recommendation Processing

The backend also handles recommendation system logic. Property similarity is calculated using similarity techniques such as cosine similarity to identify similar properties based on features like:

- Location
- Area
- Bedrooms
- Amenities

- Price range

The backend recommendation engine processes these calculations and returns the top recommended properties to users.

8. Data Storage and Model Handling

Processed datasets and trained Machine Learning models are stored locally using structured file systems and Pickle serialization techniques.

The backend accesses these stored resources whenever prediction or recommendation operations are performed.

Storage components include:

- Processed housing dataset
- Trained prediction models
- Recommendation similarity matrices
- Visualization datasets

9. Real-Time Backend Operations

The backend processing system is designed to support real-time user interaction and prediction generation. Whenever users enter property details, the backend instantly processes the input and returns predictions and recommendations dynamically.

This real-time processing improves user experience and makes the system interactive and responsive.

10. Conclusion

Data collection and backend processing are critical components of the Gurgaon Real Estate Intelligence System. These modules ensure efficient data handling, preprocessing, feature engineering, prediction processing, and recommendation generation.

The backend architecture provides smooth integration between Machine Learning models, visualization dashboards, and the Streamlit frontend interface, enabling accurate house price prediction and intelligent real estate analysis in a scalable and user-friendly environment.

6.2 Dataset and Model Management

Dataset and model management are essential components of the **Gurgaon Real Estate Intelligence System Using Random Forest and Distance - Location Based Recommendation**. These modules are responsible for organizing housing datasets, maintaining processed data, storing trained Machine Learning models, and ensuring efficient access to resources required for prediction, recommendation, and analytics operations.

Proper dataset and model management improve system performance, maintain consistency in predictions, and support scalability for future enhancements. This module ensures that datasets and trained models are handled systematically throughout the development and deployment process.

6.2.1 Housing Dataset Management

Housing dataset management focuses on collecting, organizing, storing, and maintaining real estate datasets used for Machine Learning model training, analysis, and recommendation generation.

The dataset contains multiple property-related features collected from Gurgaon real estate data sources. These datasets form the foundation of the prediction and recommendation system.

1. Dataset Structure

The housing dataset is organized in tabular format using CSV or Excel files. Each row in the dataset represents an individual property, while each column represents a specific property attribute.

The dataset includes important features such as:

- Property location
- Sector name
- Area size
- Number of bedrooms
- Number of bathrooms
- Balconies
- Furnishing status

- Property type
- Amenities
- Price information

The structured format helps in efficient data preprocessing, analysis, and model training.

2. Dataset Loading and Access

The dataset is loaded into the Python environment using pandas. Dataframes are created for easy manipulation, filtering, and analytical operations.

Common dataset management tasks include:

- Reading CSV and Excel files
- Viewing dataset dimensions
- Checking data types
- Identifying missing values
- Inspecting column information
- Filtering and sorting records

These operations help developers understand dataset quality and prepare the data for further processing.

3. Data Organization and Categorization

The housing dataset is categorized into numerical and categorical features for better preprocessing and analysis.

Numerical Features:

- Area size
- Number of bedrooms
- Bathrooms
- Price

Categorical Features:

- Location
- Furnishing status

- Property type
- Sector

Organizing features into categories simplifies preprocessing and feature engineering tasks.

4. Processed Dataset Management

After preprocessing and cleaning operations, the processed dataset is stored separately from the raw dataset.

The processed dataset includes:

- Cleaned records
- Encoded categorical variables
- Removed duplicate entries
- Handled missing values
- Scaled numerical features

Maintaining a processed dataset improves efficiency because preprocessing does not need to be repeated every time the system runs.

5. Dataset Version Control

Dataset version management is important for maintaining consistency during model training and evaluation. Different versions of datasets may be created after preprocessing or feature engineering stages.

Version control helps:

- Track dataset changes
- Compare preprocessing techniques
- Reproduce model results
- Maintain project reliability

6. Dataset Storage

The dataset is stored locally within the project directory structure in organized folders.

Typical dataset storage includes:

- Raw dataset files
- Processed dataset files
- Feature-engineered datasets
- Visualization datasets

Organized storage improves accessibility and maintainability of project resources.

6.2.2 Trained Model Storage and Management

This module handles the storage, loading, maintenance, and integration of trained Machine Learning models used for house price prediction and recommendation tasks.

Efficient model management ensures accurate predictions, faster response time, and smooth integration with the frontend application.

1. Machine Learning Model Training

After preprocessing and feature engineering, Machine Learning algorithms are trained using processed housing datasets.

Different regression models may be evaluated, including:

- Linear Regression
- Random Forest Regressor
- Decision Tree Regressor
- XGBoost Regressor

The best-performing model is selected based on evaluation metrics such as MAE, RMSE, and R^2 Score.

2. Model Serialization Using Pickle

Once training is completed, the final Machine Learning model is saved using Python Pickle serialization.

Pickle converts trained models into binary files that can be stored and reused later without retraining the model repeatedly.

Advantages of model serialization include:

- Faster application startup
- Reduced training time
- Efficient deployment
- Easy model integration

The saved model file is later loaded during real-time prediction operations.

3. Model Loading and Integration

During application execution, the backend loads the trained model from stored Pickle files.

The model is integrated into the Streamlit application and used for generating predictions whenever users enter property details.

The backend processing workflow includes:

1. Loading the trained model
2. Accepting user input
3. Formatting input data
4. Passing input to the prediction model
5. Returning predicted price results

This integration enables real-time house price prediction functionality.

4. Recommendation Data Management

The recommendation system also requires storage and management of similarity data and recommendation matrices.

The backend stores:

- Similarity matrices
- Encoded recommendation features
- Property metadata

These resources are used to generate personalized property recommendations efficiently.

5. Model Evaluation Records

Performance metrics and model evaluation results are stored for comparison and analysis.

Evaluation records may include:

- MAE (Mean Absolute Error)
- MSE (Mean Squared Error)
- RMSE (Root Mean Squared Error)
- R^2 Score

Maintaining evaluation records helps identify the most accurate prediction model.

6. Scalability and Future Model Updates

The model management system is designed to support future updates and retraining operations.

New datasets and advanced Machine Learning algorithms can be integrated easily to improve prediction accuracy and recommendation quality over time.

This scalability ensures long-term usability and adaptability of the system.

Conclusion

Dataset and model management play a critical role in maintaining the efficiency, reliability, and scalability of the Gurgaon Real Estate Intelligence System.

Proper dataset organization, preprocessing management, model storage, and integration techniques ensure smooth operation of prediction, recommendation, and analytics functionalities.

These modules support accurate Machine Learning predictions, faster processing, improved maintainability, and seamless interaction between backend and frontend components of the system.

6.3 Dataset Structure and Feature Organization

The dataset structure and feature organization are important components of the **Gurgaon Real Estate Intelligence System Using Random Forest and Distance - Location Based Recommendation** because they directly influence the performance,

accuracy, and efficiency of the Machine Learning models used for house price prediction and recommendation.

The housing dataset used in this project contains structured real estate information related to properties in Gurgaon. Proper organization of features helps in efficient preprocessing, feature engineering, prediction, recommendation, and analytical operations.

The dataset is organized in tabular format where:

- Each row represents an individual property listing
- Each column represents a specific property attribute or feature

The structured arrangement of data makes it easier to analyze housing trends, train Machine Learning models, and generate accurate predictions.

1. Dataset Structure Overview

The dataset contains multiple property-related attributes that affect house prices and recommendation quality. These features are categorized into numerical and categorical variables for better processing and analysis.

The dataset mainly includes the following types of information:

- Property location details
- Property dimensions and area
- Room and facility information
- Amenities and furnishing status
- Property pricing information
- Sector and locality details

The dataset is stored in CSV or Excel format and processed using Python libraries such as pandas.

2. Feature Categories

The features in the dataset are divided into different categories based on their data type and purpose in prediction and recommendation tasks.

2.1 Numerical Features

Numerical features contain measurable values that directly influence house prices. These features are used extensively during Machine Learning model training.

Examples of numerical features include:

Feature Name	Description
Area	Size of the property in square feet
Bedrooms	Number of bedrooms in the property
Bathrooms	Number of bathrooms available
Balconies	Number of balconies
Floor Number	Floor location of the property
Total Floors	Total floors in the building
Price	Actual property price

These numerical features are used to identify relationships between property characteristics and pricing patterns.

2.2 Categorical Features

Categorical features contain descriptive or non-numeric information about properties. These features are encoded into numerical form before being used by Machine Learning algorithms.

Examples of categorical features include:

Feature Name	Description
Location	Area or locality of the property
Sector	Gurgaon sector information
Property Type	Apartment, builder floor, villa, etc.
Furnishing Status	Furnished, semi-furnished, unfurnished
Facing Direction	Property facing direction
Ownership Type	Freehold or leasehold

Categorical features play an important role in recommendation systems and location-based price analysis.

3. Feature Organization Strategy

The project follows a structured feature organization strategy to improve preprocessing, training, and prediction performance.

The feature organization process includes:

a) Separating Input and Output Features

Input features contain property attributes used for prediction, while the output feature represents the target variable (house price).

- Input Features → Location, Area, Bedrooms, Bathrooms, Amenities
- Output Feature → Property Price

b) Grouping Similar Features

Features related to property dimensions, facilities, and locations are grouped together to simplify analysis and feature engineering.

c) Removing Unnecessary Features

Irrelevant or duplicate features that do not contribute significantly to prediction accuracy are removed from the dataset.

This organization improves model efficiency and reduces computational complexity.

4. Feature Engineering

Feature engineering is performed to improve the quality and usefulness of dataset features.

This stage includes:

- Creating new meaningful features
- Combining related columns
- Transforming raw data into usable format
- Extracting important location information
- Standardizing area and price values

Feature engineering helps Machine Learning models better understand relationships between different housing attributes.

5. Encoding and Transformation

Machine Learning algorithms require numerical input data. Therefore, categorical features are transformed using encoding techniques.

Common encoding methods include:

- Label Encoding
- One-Hot Encoding

These techniques convert location names, furnishing status, and property categories into machine-readable numerical values.

Data scaling and normalization techniques may also be applied to numerical features for consistent representation.

6. Feature Importance Analysis

Feature importance analysis is performed to identify which property attributes have the highest impact on house price prediction.

Features such as:

- Location
- Area size
- Number of bedrooms
- Amenities
- Furnishing status

often contribute significantly to property price estimation.

Understanding feature importance helps improve model performance and recommendation quality.

7. Organized Dataset for Recommendation System

The recommendation system requires organized property metadata and similarity features.

For recommendation purposes, features such as:

- Location similarity
- Amenities

- Area range
- Property type
- Price range

are structured separately to calculate similarity between properties effectively.

This organization enables the system to generate accurate personalized recommendations.

8. Dataset Storage Structure

The project stores datasets in organized directories for efficient management and access.

Typical dataset organization includes:

- Raw datasets
- Cleaned datasets
- Encoded datasets
- Visualization datasets
- Recommendation datasets

This structured storage approach improves maintainability and scalability of the system.

9. Benefits of Proper Feature Organization

Proper dataset structure and feature organization provide several advantages:

- Improved Machine Learning accuracy
- Faster preprocessing and training
- Better recommendation quality
- Reduced redundancy and noise
- Efficient data visualization
- Easier scalability and maintenance

Well-organized features make the entire system more reliable and efficient.

Conclusion

Dataset structure and feature organization are fundamental to the successful implementation of the Gurgaon Real Estate Intelligence System.

A properly structured dataset improves preprocessing, feature engineering, model training, recommendation generation, and analytical visualization processes.

The organized arrangement of numerical and categorical features enables the system to perform accurate house price prediction, efficient recommendation generation, and meaningful real estate analysis in a scalable and user-friendly manner.

6.4 Machine Learning Model Architecture

The Machine Learning Model Architecture is the core component of the **Gurgaon Real Estate Intelligence System Using Random Forest and Distance - Location Based Recommendation**. It is responsible for analyzing housing data, learning patterns from property features, and generating accurate house price predictions.

The architecture is designed in a structured and modular manner to support efficient data preprocessing, feature engineering, model training, evaluation, prediction, and recommendation integration. The overall architecture ensures scalability, reliability, and real-time prediction capability within the Streamlit-based application.

The Machine Learning pipeline follows a systematic workflow where housing data passes through multiple processing stages before generating prediction outputs.

1. Overview of Machine Learning Architecture

The Machine Learning architecture consists of several interconnected stages that work together to perform predictive analysis on real estate data.

The major stages include:

1. Data Input Layer
2. Data Preprocessing Layer
3. Feature Engineering Layer
4. Model Training Layer
5. Model Evaluation Layer
6. Prediction Layer

7. Recommendation Integration Layer
8. Output Visualization Layer

Each layer performs a specific function in the prediction pipeline and contributes to the overall efficiency of the system.

2. Data Input Layer

The data input layer is responsible for receiving housing datasets and user-provided property information.

The input data includes features such as:

- Location
- Sector
- Area size
- Number of bedrooms
- Bathrooms
- Furnishing status
- Amenities
- Property type

The dataset is loaded using pandas and stored in dataframe format for further processing.

The input layer also receives real-time property details entered by users through the Streamlit interface.

3. Data Preprocessing Layer

Raw housing data may contain missing values, duplicates, inconsistent formats, and irrelevant features. Therefore, preprocessing is performed before training the model.

The preprocessing layer performs the following tasks:

a) Handling Missing Values

Null or incomplete values are treated using imputation or removal techniques.

b) Duplicate Removal

Duplicate property entries are identified and removed.

c) Categorical Encoding

Categorical variables such as location and furnishing status are converted into numerical form using encoding techniques.

d) Data Scaling and Transformation

Numerical features may be normalized or standardized to improve model performance.

e) Outlier Detection

Abnormal property values are detected and removed to reduce noise and improve accuracy.

This layer prepares clean and structured data for feature engineering and training.

4. Feature Engineering Layer

Feature engineering improves the quality and usefulness of input features provided to the Machine Learning model.

This layer focuses on:

- Selecting important features
- Creating meaningful derived features
- Combining related attributes
- Removing irrelevant features

Features such as location, area size, and amenities are analyzed to identify their influence on property prices.

Feature engineering improves prediction accuracy and helps the model understand complex relationships between housing attributes.

5. Model Training Layer

The model training layer is responsible for training Machine Learning algorithms using processed housing datasets.

The dataset is divided into:

- Training dataset
- Testing dataset

The training dataset is used to teach the model relationships between property features and house prices.

Regression algorithms are mainly used because house price prediction is a regression problem involving continuous numerical output.

Common algorithms tested include:

- Linear Regression
- Decision Tree Regressor
- Random Forest Regressor
- XGBoost Regressor

The best-performing model is selected based on evaluation metrics and prediction performance.

6. Model Evaluation Layer

The evaluation layer measures the performance and accuracy of trained Machine Learning models.

Different evaluation metrics are used, including:

- Mean Absolute Error (MAE)
- Mean Squared Error (MSE)
- Root Mean Squared Error (RMSE)
- R^2 Score

These metrics help compare different models and identify the most accurate prediction approach.

The evaluation layer ensures that the model performs reliably on unseen test data.

7. Model Serialization and Storage

Once training and evaluation are completed, the final trained model is saved using Pickle serialization.

Model serialization converts the trained model into a binary file that can be loaded later without retraining.

Advantages include:

- Faster prediction processing
- Reduced computation time
- Easy deployment
- Efficient backend integration

The serialized model is stored locally within the project structure.

8. Prediction Layer

The prediction layer generates real-time house price predictions using the trained Machine Learning model.

The workflow includes:

1. User enters property details through Streamlit interface
2. Backend preprocesses input data
3. Features are converted into model-compatible format
4. Processed input is passed to trained model
5. Model predicts estimated property price
6. Prediction result is displayed to user

This layer provides dynamic and interactive prediction functionality.

9. Recommendation System Integration

The Machine Learning architecture is integrated with the recommendation module to provide personalized property suggestions.

The recommendation layer uses similarity-based techniques such as cosine similarity to identify similar properties based on:

- Location
- Amenities
- Area size
- Property type
- Budget range

This integration improves user experience and supports intelligent property exploration.

10. Output Visualization Layer

The output layer displays prediction results, recommendations, and analytical insights through interactive dashboards.

Visualization tools such as:

- Matplotlib
- Seaborn
- Plotly

are used to generate charts, graphs, and analytical dashboards.

Users can visualize:

- Price trends
- Location-based analysis
- Sector-wise comparisons
- Prediction analytics

through the Streamlit web application.

11. Real-Time Workflow of the Architecture

The complete workflow of the Machine Learning architecture is as follows:

1. Housing dataset is collected
2. Data preprocessing is performed
3. Features are engineered and selected
4. Machine Learning model is trained
5. Model performance is evaluated
6. Trained model is saved using Pickle
7. User enters property details
8. Backend processes user input
9. Model predicts house price
10. Recommendation system suggests similar properties

11. Results are displayed through dashboards and interface

This workflow ensures efficient and accurate real-time operation of the system.

12. Advantages of the Architecture

The Machine Learning architecture provides several advantages:

- Accurate house price prediction
- Efficient recommendation generation
- Real-time user interaction
- Modular and scalable structure
- Improved analytical capabilities
- Faster backend processing
- Easy future enhancement and deployment

The architecture is designed to support future integration of advanced Deep Learning models and cloud deployment solutions.

Conclusion

The Machine Learning Model Architecture is the central intelligence component of the Gurgaon Real Estate Intelligence System.

The architecture combines preprocessing, feature engineering, regression-based prediction models, recommendation systems, and analytical visualization into a unified framework.

This structured architecture ensures accurate predictions, efficient backend processing, personalized recommendations, and interactive real estate analytics, making the system scalable, reliable, and user-friendly.

6.5 System Workflow and Data Flow Diagram (DFD)

The **System Workflow and Data Flow Diagram (DFD)** of the **Gurgaon Real Estate Intelligence System Using Random Forest And Distance - Location Based Recommendation** represents the complete movement of data and interaction between different modules of the system. It explains how user inputs are processed through backend modules, Machine Learning models, recommendation systems, and analytics

dashboards to generate accurate house price predictions and intelligent property recommendations.

The workflow is designed using a modular architecture that ensures efficient communication between frontend and backend components while maintaining scalability, reliability, and real-time processing capabilities.

The Data Flow Diagram (DFD) visually represents how data moves from one module to another and how each component contributes to the overall system functionality.

1. Overview of System Workflow

The system workflow follows a step-by-step process where user input data is collected, processed, analyzed, and transformed into meaningful outputs such as predicted property prices, recommended properties, and analytical reports.

The workflow mainly includes the following stages:

1. User Input
2. Backend Data Processing
3. Data Validation and Preprocessing
4. Machine Learning Prediction
5. Recommendation Generation
6. Analytics and Visualization
7. Output Display
8. Data Storage and Management

Each stage plays an important role in the overall execution of the system.

2. User Input Stage

The workflow begins when users interact with the Streamlit-based web application.

Users provide property-related details such as:

- Location
- Sector
- Area size
- Number of bedrooms

- Bathrooms
- Budget range
- Furnishing status
- Amenities

The input data is collected through interactive forms, dropdown menus, sliders, and selection fields available in the user interface.

The entered information is then forwarded to the backend processing module for further operations.

3. Backend Processing Stage

The backend processing module acts as the central processing unit of the system.

It receives raw user input and performs several operations before sending the data to the Machine Learning model.

The backend processing stage includes:

a) Data Validation

The system checks whether the entered values are valid, complete, and within acceptable ranges.

b) Data Cleaning

Missing or inconsistent values are handled appropriately.

c) Encoding and Transformation

Categorical values such as location and furnishing status are converted into numerical form using encoding techniques.

d) Feature Scaling

Numerical values may be normalized or standardized to improve prediction accuracy.

The processed data is then passed to the prediction and recommendation modules.

4. Machine Learning Prediction Stage

The Machine Learning prediction engine is responsible for generating house price predictions.

The prediction process includes:

1. Loading the trained Machine Learning model
2. Accepting processed property features
3. Applying regression algorithms
4. Generating estimated house price

Regression models such as:

- Linear Regression
- Random Forest Regressor
- XGBoost Regressor

may be used for prediction purposes.

The predicted house price is then sent to the output module and analytics dashboard.

5. Recommendation System Stage

The recommendation module generates personalized property suggestions for users.

This module analyzes property similarity based on:

- Location
- Budget
- Area size
- Amenities
- Property type

Similarity algorithms such as cosine similarity are used to identify similar properties from the dataset.

The recommendation engine returns the top recommended properties that closely match user preferences and selected property features.

The generated recommendations are displayed through the user interface.

6. Analytics and Visualization Stage

The analytics module converts processed data and prediction results into interactive visual insights.

Visualization libraries such as:

- Matplotlib
- Seaborn
- Plotly

are used to generate:

- Price distribution graphs
- Area vs price analysis
- Sector-wise comparisons
- Location-based trends
- Market overview dashboards

The analytics dashboard helps users understand real estate market behavior more effectively.

7. Output Display Stage

After prediction, recommendation, and analysis are completed, the final outputs are displayed to users through the Streamlit web application.

The output includes:

- Predicted house price
- Recommended properties
- Interactive charts and dashboards
- Analytical reports and insights

The results are displayed in a clean, organized, and user-friendly interface.

8. Database and Data Storage Stage

The system also includes storage modules that maintain datasets, trained models, and analytics resources.

The storage layer contains:

- Raw housing datasets
- Processed datasets
- Trained Machine Learning models

- Recommendation similarity matrices
- Analytics data

These stored resources are accessed whenever prediction, recommendation, or visualization operations are performed.

9. Data Flow in the DFD

The Data Flow Diagram (DFD) shows how information moves through different entities and modules in the system.

Main Data Flow Sequence:

Step 1: User → User Interface

Users enter property details through the Streamlit application.

Step 2: User Interface → Backend Processing

The frontend sends user input data to the backend server for processing.

Step 3: Backend Processing → Machine Learning Module

Processed and transformed data is passed to the trained Machine Learning model for prediction.

Step 4: Backend Processing → Recommendation Module

The recommendation engine receives processed property features to generate similar property suggestions.

Step 5: ML Module → Output Layer

Predicted house price results are generated and sent to the interface.

Step 6: Recommendation Module → Output Layer

Recommended property lists are displayed to users.

Step 7: Analytics Module → Dashboard

Charts, graphs, and market insights are visualized in the analytics dashboard.

Step 8: Database ↔ Backend

The backend continuously interacts with stored datasets and trained models during prediction and recommendation operations.

10. Advantages of the Workflow and DFD

The designed workflow and DFD provide several benefits:

- Smooth communication between modules
- Efficient real-time prediction processing
- Modular and scalable architecture
- Better maintainability
- Improved user interaction
- Accurate recommendation generation
- Clear visualization of system operations

The modular workflow also supports future integration of advanced AI models and cloud deployment technologies.

Conclusion

The System Workflow and Data Flow Diagram (DFD) provide a complete representation of how the Gurgaon Real Estate Intelligence System operates internally.

The workflow demonstrates the interaction between user input, backend processing, Machine Learning prediction, recommendation systems, analytics visualization, and storage components.

The DFD ensures clear understanding of data movement and system architecture, while the structured workflow enables accurate house price prediction, personalized recommendations, and intelligent real estate analytics in a scalable and user-friendly environment.

6.6 Model Testing and Performance Evaluation

Model testing and performance evaluation are important stages in the development of the **Gurgaon Real Estate Intelligence System Using Random Forest And Distance - Location Based Recommendation**. These processes help determine the accuracy, reliability, efficiency, and overall performance of the Machine Learning models used for house price prediction and recommendation.

The main objective of testing and evaluation is to ensure that the trained Machine Learning model can accurately predict house prices for unseen property data and

perform consistently in real-world scenarios. Proper evaluation also helps identify the best-performing model among multiple regression algorithms.

The system uses various testing techniques, validation methods, and performance metrics to analyze the effectiveness of the prediction model.

1. Purpose of Model Testing

The primary purpose of model testing is to evaluate how well the trained Machine Learning model performs on new and unseen data.

Testing helps in:

- Measuring prediction accuracy
- Detecting overfitting and underfitting
- Comparing different Machine Learning algorithms
- Improving model reliability
- Validating real-world usability

Without proper testing, the prediction system may generate inaccurate or inconsistent house price estimations.

2. Dataset Splitting

Before training and testing the Machine Learning model, the dataset is divided into two major parts:

a) Training Dataset

The training dataset is used to train the Machine Learning model and help it learn relationships between property features and house prices.

b) Testing Dataset

The testing dataset is used to evaluate the model's performance on unseen data.

Generally, the dataset is divided using ratios such as:

- 80% Training Data
- 20% Testing Data

This separation helps measure how effectively the model generalizes to new property data.

3. Machine Learning Algorithms Evaluated

Different regression algorithms are tested to identify the most suitable model for house price prediction.

The evaluated algorithms may include:

- Linear Regression
- Decision Tree Regressor
- Random Forest Regressor
- XGBoost Regressor

Each algorithm is trained and tested separately, and their performances are compared using evaluation metrics.

4. Model Evaluation Metrics

Several evaluation metrics are used to measure prediction accuracy and model performance. These metrics help analyze how close the predicted prices are to the actual property prices.

4.1 Mean Absolute Error (MAE)

MAE measures the average absolute difference between predicted prices and actual prices.

Lower MAE values indicate better prediction accuracy.

$$MAE = \frac{1}{n}\sum_{i=1}^{n} | y_i - \hat{y}_i |$$

Where:

- y_i= Actual house price
- $\hat{y}_i$= Predicted house price
- n= Total number of observations

4.2 Mean Squared Error (MSE)

MSE measures the average squared difference between actual and predicted values.

It penalizes larger errors more heavily and helps evaluate model consistency.

$$MSE = \frac{1}{n}\sum_{i=1}^{n}(y_i - \hat{y}_i)^2$$

Lower MSE values indicate better model performance.

4.3 Root Mean Squared Error (RMSE)

RMSE is the square root of MSE and provides error values in the same unit as house prices.

It helps interpret prediction error more easily.

$$RMSE = \sqrt{\frac{1}{n}\sum_{i=1}^{n}(y_i - \hat{y}_i)^2}$$

Lower RMSE values indicate more accurate predictions.

4.4 R^2 Score (Coefficient of Determination)

The R^2 Score measures how well the model explains variations in house prices.

$$R^2 = 1 - \frac{\sum(y_i - \hat{y}_i)^2}{\sum(y_i - \bar{y})^2}$$

Where:

- $\bar{y}$= Mean of actual prices

R^2 values closer to 1 indicate better model performance and prediction capability.

5. Cross-Validation

Cross-validation techniques may also be applied to improve model reliability and reduce overfitting.

The dataset is divided into multiple folds, and the model is trained and tested repeatedly on different subsets of the data.

Benefits of cross-validation include:

- Better generalization
- Reduced overfitting

- Improved stability
- Reliable performance measurement

6. Overfitting and Underfitting Analysis

During testing, the model is analyzed for overfitting and underfitting issues.

Overfitting

Occurs when the model performs very well on training data but poorly on testing data.

Underfitting

Occurs when the model cannot learn patterns properly from the dataset.

Proper feature selection, tuning, and validation techniques help reduce these problems.

7. Hyperparameter Tuning

Hyperparameter tuning is performed to improve model performance and optimize prediction accuracy.

Techniques such as Grid Search or Random Search may be used to identify the best parameter combinations for Machine Learning algorithms.

This stage helps:

- Improve accuracy
- Reduce prediction error
- Enhance model stability

8. Recommendation System Testing

The recommendation system is also evaluated to ensure that similar and relevant properties are suggested accurately.

Testing focuses on:

- Similarity quality
- Recommendation relevance
- User preference matching
- Recommendation consistency

This improves the overall user experience of the system.

9. Visualization of Model Performance

Visualization techniques are used to analyze and compare model performance.

Graphs and plots such as:

- Actual vs Predicted Price Graphs
- Residual Error Plots
- Correlation Heatmaps
- Performance Comparison Charts

help understand prediction behavior more effectively.

Visualization libraries used include:

- Matplotlib
- Seaborn
- Plotly

10. Final Model Selection

After testing and evaluation, the best-performing Machine Learning model is selected based on:

- Highest prediction accuracy
- Lowest error values
- Better generalization capability
- Stable performance on unseen data

The selected model is then saved using Pickle and integrated into the Streamlit application for real-time prediction.

11. Benefits of Performance Evaluation

Proper testing and evaluation provide several advantages:

- Improved prediction accuracy
- Reliable real-world performance

- Better recommendation quality
- Reduced errors and inconsistencies
- Increased system reliability
- Enhanced user trust and usability

These evaluation techniques ensure that the system delivers accurate and consistent house price predictions.

Conclusion

Model testing and performance evaluation are critical components of the Gurgaon Real Estate Intelligence System.

The use of evaluation metrics, validation techniques, performance analysis, and hyperparameter tuning ensures that the Machine Learning models perform accurately and reliably in real-world scenarios.

The evaluation process helps select the best-performing prediction model and improves the overall efficiency, scalability, and usability of the real estate intelligence platform.

6.7 Recommendation System Implementation

The Recommendation System Implementation is an important component of the **Gurgaon Real Estate Intelligence System Using Random Forest And Distance - Location Based Recommendation**. The main objective of this module is to provide users with intelligent and personalized property suggestions based on property features, user preferences, and similarity analysis.

In real estate platforms, users often spend significant time searching and comparing multiple properties manually. The recommendation system helps simplify this process by automatically identifying and suggesting properties that closely match the user's interests, budget, location preferences, and property requirements.

The recommendation engine enhances user experience by making property discovery faster, smarter, and more efficient. It works together with the Machine Learning prediction system and analytics dashboard to provide a complete intelligent real estate solution.

1. Overview of the Recommendation System

The recommendation system is designed using similarity-based recommendation techniques.

The system analyzes property features and calculates similarity between different properties to identify and recommend the most relevant options to users.

The recommendation workflow includes:

1. Property feature extraction
2. Feature preprocessing and encoding
3. Similarity calculation
4. Recommendation ranking
5. Recommendation display

The generated recommendations are displayed through the Streamlit web application interface.

2. Purpose of the Recommendation System

The main goals of the recommendation module are:

- Suggest similar properties automatically
- Reduce manual property searching effort
- Improve user experience
- Provide personalized recommendations
- Help users discover better housing options
- Support data-driven property selection

The recommendation system helps buyers, investors, and renters explore properties more effectively.

3. Property Features Used for Recommendation

The recommendation engine uses multiple property attributes to calculate similarity between properties.

Important recommendation features include:

- Property location

- Sector
- Area size
- Number of bedrooms
- Bathrooms
- Furnishing status
- Amenities
- Property type
- Budget range

These features help the system identify properties that closely match user preferences and selected property characteristics.

4. Data Preprocessing for Recommendation

Before generating recommendations, the property data undergoes preprocessing and transformation.

The preprocessing stage includes:

a) Handling Missing Values

Incomplete property records are cleaned or updated appropriately.

b) Encoding Categorical Features

Categorical values such as location and property type are converted into numerical format using encoding techniques.

c) Feature Scaling

Numerical values are normalized to maintain consistency during similarity calculations.

d) Removing Duplicate Records

Duplicate property entries are removed to improve recommendation quality.

These preprocessing steps improve the efficiency and accuracy of the recommendation engine.

5. Similarity-Based Recommendation Approach

The system uses similarity-based filtering techniques to recommend properties.

The recommendation engine compares selected properties with other properties in the dataset and calculates similarity scores based on feature values.

Properties with the highest similarity scores are recommended to users.

The recommendation process includes:

1. Selecting a target property
2. Extracting important property features
3. Calculating similarity scores
4. Ranking similar properties
5. Displaying top recommendations

This approach helps provide relevant and meaningful property suggestions.

6. Cosine Similarity Technique

One of the primary techniques used in the recommendation system is cosine similarity.

Cosine similarity measures the similarity between two property feature vectors by calculating the cosine of the angle between them.

$$\text{Cosine Similarity} = \frac{A \cdot B}{\| A \| \quad \| B \|}$$

Where:

- A= Feature vector of first property
- B= Feature vector of second property

A similarity score closer to 1 indicates that the properties are highly similar.

This technique is effective for identifying related properties based on multiple attributes.

7. Recommendation Workflow

The recommendation workflow follows these steps:

Step 1: User Selection

The user selects a property or enters search preferences through the Streamlit interface.

Step 2: Feature Extraction

The system extracts important property features from the dataset.

Step 3: Similarity Calculation

Cosine similarity is calculated between the selected property and all other properties.

Step 4: Ranking Properties

Properties are ranked according to similarity scores.

Step 5: Top-N Recommendations

The system returns the top recommended properties with the highest similarity scores.

Step 6: Display to User

Recommended properties are displayed through the web application dashboard.

This workflow enables fast and intelligent property recommendations in real time.

8. Integration with Streamlit Interface

The recommendation module is integrated into the Streamlit application to provide interactive user experience.

Users can:

- Search properties
- Select preferred locations
- Explore recommended properties
- Compare housing options

The integration ensures smooth communication between the frontend interface and backend recommendation engine.

9. Recommendation Output Display

The recommendation results are displayed in an organized and interactive format.

The output may include:

- Property images
- Price details
- Location information
- Area specifications
- Similarity-based rankings

- Recommended property lists

This improves usability and helps users analyze housing options more effectively.

10. Benefits of the Recommendation System

The recommendation system provides several advantages:

- Faster property discovery
- Personalized suggestions
- Improved user engagement
- Reduced search complexity
- Better decision-making support
- Enhanced real estate exploration

It helps users identify suitable properties quickly without manually exploring large datasets.

11. Scalability and Future Enhancements

The recommendation system is designed to support future improvements such as:

- AI-based personalized recommendations
- Hybrid recommendation models
- User behavior analysis
- Real-time recommendation updates
- Deep Learning-based recommendation systems
- Integration with live property APIs

These future enhancements can further improve recommendation accuracy and user experience.

12. Challenges in Recommendation Implementation

Some challenges faced during implementation include:

- Handling large datasets efficiently
- Managing sparse or incomplete property information

- Improving recommendation relevance
- Reducing redundant recommendations
- Maintaining real-time performance

Optimization and preprocessing techniques help overcome these challenges.

Conclusion

The Recommendation System Implementation plays a significant role in enhancing the functionality and intelligence of the Gurgaon Real Estate Intelligence System.

By using similarity-based techniques such as cosine similarity, the system provides accurate and personalized property recommendations based on user preferences and housing characteristics.

The recommendation module improves user experience, supports better property selection, and makes the real estate platform more intelligent, interactive, and efficient.

6.8 Visualization and Analytics Integration

Visualization and analytics integration is an essential component of the **Gurgaon Real Estate Intelligence System Using Random Forest And Distance - Location Based Recommendation**. This module helps transform complex real estate data into meaningful visual insights that users can easily understand and analyze.

The integration of visualization and analytics enables users to explore housing market trends, compare property prices, analyze location-based patterns, and make informed real estate decisions through interactive dashboards and graphical reports.

The visualization module works together with the Machine Learning prediction system and recommendation engine to provide a complete data-driven real estate analysis platform.

1. Purpose of Visualization and Analytics Integration

The primary objective of this module is to simplify complex housing data and present it in an interactive and visually understandable format.

The analytics dashboard helps users:

- Understand housing market behavior
- Analyze price trends

- Compare property characteristics
- Identify location-based pricing patterns
- Explore market insights visually
- Support data-driven decision-making

Visualization improves user experience and enhances interpretation of Machine Learning predictions and recommendations.

2. Overview of Analytics Dashboard

The analytics dashboard is integrated into the Streamlit web application and provides real-time visual analysis of real estate data.

The dashboard displays multiple charts, graphs, maps, and statistical summaries generated from processed housing datasets and prediction outputs.

The dashboard acts as a central analytics interface where users can interactively explore property-related information.

3. Data Sources for Analytics

The visualization module uses data from multiple sources within the system, including:

- Raw housing datasets
- Processed datasets
- Machine Learning prediction outputs
- Recommendation system results
- Feature-engineered datasets

These datasets are analyzed to generate meaningful visual representations and market insights.

4. Visualization Libraries Used

Several Python visualization libraries are integrated into the system for creating interactive and informative charts.

The main libraries used include:

- Matplotlib

- Seaborn
- Plotly

These libraries provide powerful visualization capabilities for real estate analytics and dashboard development.

5. Types of Visualizations Implemented

The system includes multiple visualization techniques to represent housing market data effectively.

5.1 Price Distribution Analysis

Price distribution charts help users understand how property prices are distributed across different locations and property categories.

Visualization techniques used:

- Histograms
- Distribution plots
- Density plots

These visualizations help identify pricing patterns and market ranges.

5.2 Area vs Price Analysis

Scatter plots are used to analyze the relationship between property area and price.

This analysis helps users understand how area size influences property pricing in different sectors of Gurgaon.

The visualization supports comparative real estate analysis and market understanding.

5.3 Location-Based Analytics

Location-based visualization helps analyze price trends and property distribution across different sectors and localities.

This analysis may include:

- Sector-wise property comparison

- Locality price analysis
- Geographical price trends

Location-based insights are important for buyers and investors making regional property decisions.

5.4 Correlation Analysis

Correlation heatmaps are generated to analyze relationships between different property features such as:

- Area
- Bedrooms
- Bathrooms
- Amenities
- Price

Heatmaps help identify which features have the strongest influence on house prices.

5.5 Comparative Market Analysis

Comparative charts allow users to compare multiple properties based on:

- Price
- Area
- Amenities
- Furnishing status
- Location

These visualizations support better property evaluation and comparison.

5.6 Recommendation Visualization

The recommendation system output is also integrated into the dashboard.

Users can visualize:

- Similar property suggestions
- Recommendation rankings

- Property similarity comparisons

This improves the recommendation experience and helps users explore alternatives more effectively.

6. Interactive Dashboard Features

The dashboard is designed to be highly interactive and user-friendly.

Users can dynamically:

- Filter properties by location
- Select budget ranges
- Analyze sector-wise trends
- Explore recommendation results
- View prediction analytics

Interactive controls such as dropdown menus, sliders, and filters improve usability and user engagement.

7. Integration with Machine Learning Predictions

The analytics module is integrated with the Machine Learning prediction engine.

After generating predictions, the dashboard displays analytical insights related to:

- Predicted house prices
- Historical pricing trends
- Model performance analysis
- Feature importance analysis

This integration helps users better understand the prediction results generated by the system.

8. Real-Time Data Visualization

The system supports real-time visualization updates whenever users interact with the application.

When users enter property details or modify filters, the dashboard dynamically updates charts and analytical reports instantly.

This real-time interaction improves responsiveness and enhances user experience.

9. Benefits of Visualization Integration

The integration of visualization and analytics provides several advantages:

- Improved data interpretation
- Better understanding of housing trends
- Interactive market exploration
- Enhanced decision-making support
- Increased user engagement
- Simplified complex data analysis

Visual insights make the real estate platform more informative and practical for users.

10. Challenges in Visualization Integration

Some challenges faced during implementation include:

- Managing large datasets efficiently
- Maintaining dashboard responsiveness
- Handling real-time updates
- Reducing visualization complexity
- Ensuring clear graphical representation

Optimization techniques and efficient data processing help overcome these challenges.

11. Future Enhancements

The visualization and analytics module can be enhanced further using:

- Geographic Information System (GIS) integration
- Interactive map-based analytics
- Real-time market trend analysis

- AI-driven analytics dashboards
- Advanced business intelligence tools

These improvements can make the platform more advanced and enterprise-ready.

Conclusion

Visualization and analytics integration play a major role in improving the usability and intelligence of the **Gurgaon Real Estate Intelligence System Using Random Forest And Distance - Location Based Recommendation**.

The integration of charts, graphs, dashboards, and interactive analytical tools helps users understand housing market patterns, evaluate properties, and interpret prediction results more effectively.

By combining Machine Learning predictions with interactive visual analytics, the system provides a comprehensive and intelligent real estate analysis platform that supports smarter and more data-driven decision-making.

6.9 Sample Code Snippets and Implementation Examples

This section presents important sample code snippets and implementation examples used in the development of the **Gurgaon Real Estate Intelligence System Using Random Forest And Distance - Location Based Recommendation**. These code examples demonstrate how different modules such as data preprocessing, Machine Learning model training, recommendation systems, visualization, and Streamlit integration are implemented within the project.

The implementation is mainly developed using Python and various Data Science and Machine Learning libraries such as pandas, Scikit-learn, and Streamlit.

1. Importing Required Libraries

The following code imports important libraries required for data processing, Machine Learning, visualization, and web application development.

```
import pandas as pd

import numpy as np

import streamlit as st

import pickle
```

```
from sklearn.model_selection import train_test_split
from sklearn.linear_model import LinearRegression
from sklearn.metrics import mean_absolute_error, r2_score
from sklearn.preprocessing import OneHotEncoder
from sklearn.compose import ColumnTransformer
from sklearn.pipeline import Pipeline

import seaborn as sns
```

2. Loading the Housing Dataset

The dataset is loaded using Pandas dataframe for preprocessing and analysis.

```
df=pd.read_csv("gurgaon_properties.csv")
print(df.head())
print(df.shape)
print(df.info())
```

This code helps inspect the dataset structure and verify feature information.

3. Handling Missing Values

Missing values are identified and handled during preprocessing.

```
#Checknullvalues
print(df.isnull().sum())

#Fillmissingvalues
df.fillna(method='ffill', inplace=True)
```

This improves dataset quality before training the Machine Learning model.

4. Feature Selection

Important property features are selected for prediction.

```
features=['sector','area','bedroom','bathroom']
target='price'

X=df[features]
y = df[target]
```

These features are used as input variables for house price prediction.

5. Data Splitting

The dataset is divided into training and testing datasets.

```
X_train,X_test,y_train,y_test=train_test_split(
   X,y,test_size=0.2,random_state=42
)
```

This helps evaluate model performance on unseen data.

6. Encoding Categorical Features

Categorical variables such as location or sector are encoded using OneHotEncoder.

```
categorical_features=['sector']

preprocessor=ColumnTransformer(
   transformers=[
      ('cat',OneHotEncoder(handle_unknown='ignore'),
       categorical_features)
   ],
   remainder='passthrough'
)
```

Encoding converts categorical data into numerical form for Machine Learning algorithms.

7. Machine Learning Model Training

A Linear Regression model is trained using processed housing data.

```
model=Pipeline([
   ('preprocessor',preprocessor),
   ('regressor',LinearRegression())
])
```

```
model.fit(X_train, y_train)
```

The model learns relationships between property features and house prices.

8. Model Prediction

The trained model predicts house prices for test data.

```
y_pred=model.predict(X_test)

print(y_pred[:5])
```

Prediction results are compared with actual values for evaluation.

9. Model Evaluation

The prediction model is evaluated using MAE and R^2 Score.

```
mae=mean_absolute_error(y_test,y_pred)
r2=r2_score(y_test,y_pred)

print("MAE:",mae)
print("R2 Score:", r2)
```

These metrics help measure model accuracy and reliability.

10. Saving the Trained Model

The trained Machine Learning model is saved using Pickle serialization.

```
withopen("house_price_model.pkl","wb")asfile:
  pickle.dump(model, file)
```

This allows the model to be reused without retraining.

11. Loading the Saved Model

The saved model is loaded during application execution.

```
withopen("house_price_model.pkl","rb")asfile:
  trained_model = pickle.load(file)
```

This model is later used for real-time prediction.

12. Streamlit User Interface Example

The following code creates a simple Streamlit interface for user interaction.

```
st.title("GurgaonRealEstateIntelligenceSystem")

sector=st.selectbox("SelectSector",df['sector'].unique())
area=st.number_input("EnterArea")
bedroom=st.number_input("NumberofBedrooms")
bathroom = st.number_input("Number of Bathrooms")
```

This interface collects user input for prediction.

13. Real-Time House Price Prediction

The entered property details are processed and passed to the model for prediction.

```
ifst.button("PredictPrice"):

  input_data=pd.DataFrame({
    'sector':[sector],
    'area':[area],
    'bedroom':[bedroom],
    'bathroom':[bathroom]
  })

  prediction=trained_model.predict(input_data)

  st.success(f"Predicted Price: ₹ {prediction[0]:,.2f}")
```

The predicted price is displayed instantly on the web interface.

14. Recommendation System Example

A basic cosine similarity recommendation system is implemented for suggesting similar properties.

```
fromsklearn.metrics.pairwiseimportcosine_similarity

similarity_matrix=cosine_similarity(encoded_features)

similar_properties=similarity_matrix[0]
```

```
print(similar_properties)
```

This code calculates similarity between property features.

15. Data Visualization Example

Visualization is implemented using Matplotlib and Seaborn libraries.

```
plt.figure(figsize=(8,5))

sns.scatterplot(x=df['area'],y=df['price'])

plt.title("AreavsPriceAnalysis")
plt.xlabel("Area")
plt.ylabel("Price")

plt.show()
```

This graph helps analyze the relationship between area and house prices.

16. Correlation Heatmap Example

Heatmaps help analyze relationships between property features.

```
plt.figure(figsize=(10,6))

sns.heatmap(df.corr(),annot=True,cmap='coolwarm')

plt.title("FeatureCorrelationHeatmap")

plt.show()
```

This visualization helps identify important features influencing house prices.

17. Analytics Dashboard Example

Interactive charts are implemented using Plotly.

```
importplotly.expressaspx

fig=px.histogram(df,x='price',nbins=30,title="PriceDistribution")
```

```
fig.show()
```

Plotly improves dashboard interactivity and user experience.

18. Benefits of the Implementation

The implemented code structure provides several advantages:

- Modular architecture
- Real-time prediction capability
- Easy maintainability
- Efficient preprocessing and training
- Interactive dashboard support
- Scalable system design

The implementation demonstrates practical application of Machine Learning and Data Analytics in real estate systems.

Conclusion

The sample code snippets and implementation examples demonstrate the practical development of the Gurgaon Real Estate Intelligence System using Python, Machine Learning, Streamlit, and visualization libraries.

These implementations cover major project functionalities including dataset handling, preprocessing, prediction, recommendation systems, visualization dashboards, and frontend integration.

The provided examples illustrate how Machine Learning and Data Analytics techniques are combined to build an intelligent and interactive real estate analysis platform.

7 System Specifications

The system specifications define the software, hardware, and environmental requirements necessary for the successful development, execution, testing, and deployment of the **Gurgaon Real Estate Intelligence System Using Random Forest - Distance and Location Based Recommendation**. These specifications ensure that the system performs efficiently, supports Machine Learning operations, and provides a smooth user experience for house price prediction, recommendation generation, and real estate analytics.

The project is developed using modern Data Science, Machine Learning, and Web Application technologies. Proper system specifications are important to maintain compatibility, scalability, reliability, and efficient execution of the application.

The system specifications are divided into three major categories:

1. Software Requirements
2. Hardware Requirements
3. Environmental Requirements

These requirements support data preprocessing, Machine Learning model training, visualization generation, recommendation systems, and Streamlit-based web application deployment.

The software requirements include programming languages, Machine Learning libraries, development tools, operating systems, and deployment frameworks required for implementing the system.

The hardware requirements define the minimum and recommended computing resources needed for model training, backend processing, dataset handling, and application execution. These include processor specifications, memory requirements, storage capacity, and internet connectivity.

The environmental requirements describe the development environment, deployment environment, and network infrastructure needed for smooth functioning of the application. These requirements ensure proper integration between Machine Learning modules, visualization dashboards, datasets, and the frontend interface.

The defined system specifications provide a stable and scalable platform for implementing intelligent real estate analysis, accurate house price prediction, personalized recommendation systems, and interactive analytics dashboards within the Gurgaon Real Estate Intelligence System.

7.1 Development Stack

The development stack of the **Gurgaon Real Estate Intelligence System Using Random Forest and Distance - Location Based Recommendation** consists of the programming languages, frameworks, libraries, Machine Learning tools, and visualization technologies used to design, develop, test, and deploy the application.

The selected technology stack provides a scalable, efficient, and interactive environment for implementing house price prediction, recommendation systems, data analytics, and visualization dashboards. The development stack combines Machine Learning, Data Science, and Web Application Development technologies into a unified platform.

The major components of the development stack are described below:

1. Python Programming Language

Python is the primary programming language used for the development of the project. Python is widely used in Machine Learning and Data Science because of its simplicity, readability, and extensive library support.

Python is used for:

- Data preprocessing
- Machine Learning model development
- Backend logic implementation
- Recommendation system development
- Visualization integration
- Streamlit web application development

Its flexibility and large ecosystem make it suitable for real estate analytics applications.

2. Data Analysis Libraries

The project uses powerful Python libraries for handling and analyzing housing datasets.

a) pandas

Pandas is used for:

- Dataset loading

- Data cleaning
- Data preprocessing
- Data manipulation
- Feature organization

It helps manage structured housing data efficiently using dataframes.

b) NumPy

NumPy is used for numerical computations and mathematical operations during data preprocessing and Machine Learning implementation.

It provides support for:

- Array operations
- Mathematical calculations
- Numerical transformations
- Matrix processing

3. Machine Learning Libraries

The project uses Machine Learning libraries for model training, testing, prediction, and evaluation.

Scikit-learn

Scikit-learn is the primary Machine Learning library used in the system.

It is used for:

- Regression model implementation
- Data preprocessing
- Model training and testing
- Feature encoding
- Model evaluation
- Recommendation similarity calculations

Algorithms such as Linear Regression, Random Forest Regressor, and Decision Tree Regressor are implemented using Scikit-learn.

4. Visualization Libraries

Visualization libraries are integrated to generate charts, dashboards, and analytical reports for real estate market analysis.

a) Matplotlib

Matplotlib is used for generating static charts and graphs such as:

- Scatter plots
- Histograms
- Line charts
- Performance graphs

b) Seaborn

Seaborn is used for statistical data visualization and analytical graphs such as:

- Heatmaps
- Correlation analysis
- Distribution plots

c) Plotly

Plotly is used for creating interactive dashboards and real-time visual analytics within the Streamlit application.

5. Web Application Framework

Streamlit

Streamlit is used to develop the interactive frontend web application of the project.

It provides:

- User input forms
- Interactive dashboards
- Real-time prediction display
- Recommendation interface
- Visualization integration

Streamlit simplifies deployment and allows rapid development of Machine Learning web applications.

6. Model Serialization Tools

Pickle

Pickle is used for saving and loading trained Machine Learning models.

It helps:

- Store trained models
- Reload models without retraining
- Improve prediction speed
- Simplify deployment

Serialized models are integrated into the Streamlit application for real-time prediction functionality.

7. Dataset Storage Formats

The project uses structured file formats for storing datasets and processed data.

Supported formats include:

- CSV files
- Excel files

These formats provide easy dataset management and compatibility with Python libraries.

8. Development Environment Tools

The project is developed and tested using modern development tools and IDEs such as:

- Jupyter Notebook
- Visual Studio Code
- PyCharm

These tools support code development, debugging, experimentation, and visualization.

9. Version Control and Project Management

GitHub

GitHub is used for:

- Version control
- Source code management
- Project collaboration
- Backup and repository hosting

Version control helps maintain code consistency and project scalability.

10. Advantages of the Development Stack

The selected development stack provides several benefits:

- Easy Machine Learning integration
- Efficient data handling
- Interactive visualization support
- Real-time prediction capability
- Scalable architecture
- Simplified deployment
- User-friendly frontend development

The stack is suitable for building intelligent real estate analytics applications.

7.2 Operating Systems

The **Gurgaon Real Estate Intelligence System Using Random Forest and Distance - Location Based Recommendation** is designed to be compatible with multiple operating systems to ensure flexibility, portability, and ease of development and deployment. The selected technologies and development tools used in the project support cross-platform execution, allowing the application to run efficiently on different environments.

Operating system compatibility is important for Machine Learning model development, backend processing, data analysis, Streamlit application execution, and deployment activities. The system is tested and developed primarily in Windows environments, while also supporting Linux and macOS platforms.

The major operating systems supported by the project are described below:

1. Windows Operating System

The project is primarily developed and tested on Microsoft Windows operating systems such as:

- Windows 10
- Windows 11

Windows provides a user-friendly environment for Python development, Machine Learning experimentation, and Streamlit application execution.

The Windows environment supports:

- Python installation and package management
- Jupyter Notebook execution
- Streamlit web application hosting
- Machine Learning model training
- Visualization dashboard development

Development tools such as Visual Studio Code and PyCharm work efficiently on Windows systems.

2. Linux Operating System

The system also supports Linux-based environments, especially Ubuntu distributions commonly used for Data Science and deployment purposes.

Supported Linux environments include:

- Ubuntu
- Debian-based Linux systems

Linux provides advantages such as:

- Better resource management
- Efficient backend processing
- Faster deployment support
- Improved scalability
- Enhanced server compatibility

Linux environments are suitable for cloud deployment and production-level hosting of Machine Learning applications.

3. macOS Operating System

The project can also run on macOS environments used by Apple devices.

macOS supports:

- Python development
- Streamlit applications
- Data Science libraries
- Visualization frameworks

The compatibility ensures flexibility for developers using MacBook or Apple desktop systems for project implementation and testing.

4. Cross-Platform Compatibility

The Gurgaon Real Estate Intelligence System is developed using Python and platform-independent libraries, making the application highly portable across operating systems.

Cross-platform compatibility allows:

- Easy migration between systems
- Flexible deployment options
- Consistent application behavior
- Improved accessibility for developers

This portability improves maintainability and scalability of the project.

5. Operating System Requirements

The recommended minimum operating system requirements include:

Component	Requirement
Operating System	Windows 10 / Ubuntu / macOS
Python Version	Python 3.9 or higher

Component	Requirement
RAM	Minimum 8 GB
Storage	Minimum 256 GB
Internet Connectivity	Required for deployment and package installation

These specifications ensure smooth execution of Machine Learning and analytics operations.

6. Benefits of Multi-OS Support

Supporting multiple operating systems provides several advantages:

- Flexibility for developers
- Easier deployment options
- Better compatibility with cloud environments
- Improved accessibility
- Enhanced scalability and portability

It also ensures that the project can be executed in both local and production environments without major modifications.

7.3 Development Tools & IDEs

The development of the **Gurgaon Real Estate Intelligence System Using Random Forest And Distance - Location Based Recommendation** requires various development tools and Integrated Development Environments (IDEs) for coding, debugging, data analysis, Machine Learning implementation, visualization, testing, and deployment.

These tools help improve productivity, simplify project management, and provide an efficient environment for developing real estate analytics and Machine Learning applications. The selected IDEs and tools support Python programming, dataset handling, visualization integration, and Streamlit-based web application development.

The major development tools and IDEs used in the project are described below:

1. Jupyter Notebook

Jupyter Notebook

Jupyter Notebook is one of the primary tools used during the data analysis and Machine Learning development stages of the project.

It provides an interactive coding environment that allows developers to write and execute Python code step-by-step while visualizing outputs instantly.

Jupyter Notebook is mainly used for:

- Data preprocessing
- Exploratory Data Analysis (EDA)
- Data visualization
- Feature engineering
- Machine Learning experimentation
- Model evaluation

Its interactive interface makes it highly suitable for Data Science and Machine Learning workflows.

2. Visual Studio Code (VS Code)

Visual Studio Code

Visual Studio Code is used as the primary source-code editor for project development.

It provides lightweight and powerful features for Python development and Streamlit application implementation.

Major features used in the project include:

- Syntax highlighting
- Code auto-completion
- Integrated terminal
- Debugging support
- Extension support
- GitHub integration

VS Code helps manage project files efficiently and supports both frontend and backend development tasks.

3. PyCharm IDE

PyCharm

PyCharm is another IDE used for Python-based development and Machine Learning implementation.

It provides advanced development features such as:

- Intelligent code suggestions
- Error detection
- Debugging tools
- Project management support
- Virtual environment management

PyCharm improves development efficiency and helps organize large project structures more effectively.

4. Python Interpreter

The Python interpreter is an essential development component used to execute Python scripts and Machine Learning programs.

It supports:

- Script execution
- Package management
- Backend logic processing
- Data analysis operations

Python acts as the core runtime environment for the entire project.

5. Git and GitHub

GitHub

Git and GitHub are used for version control and project management.

These tools help:

- Track code changes

- Maintain project versions
- Backup source code
- Collaborate on development
- Manage repositories

Version control ensures better project organization and scalability during development.

6. Streamlit Development Environment

Streamlit

The Streamlit environment is used for building and testing the interactive frontend interface of the application.

It enables:

- Real-time application execution
- Interactive dashboard creation
- User interface testing
- Dynamic prediction display

Streamlit simplifies deployment of Machine Learning models as web applications.

7. Command Line Interface (CLI)

The Command Prompt or Terminal is used for executing Python programs, installing packages, running Streamlit applications, and managing virtual environments.

CLI operations include:

- Running Python scripts
- Installing dependencies using pip
- Launching Streamlit applications
- Managing project directories

The command-line interface improves flexibility and project management.

8. Package and Dependency Management Tools

Python package management tools are used to install and manage libraries required for Machine Learning and visualization.

Important tools include:

- pip
- virtualenv

These tools help maintain isolated development environments and ensure dependency compatibility.

9. Benefits of Development Tools and IDEs

The selected development tools provide several advantages:

- Faster development process
- Efficient debugging support
- Better project organization
- Interactive Machine Learning experimentation
- Simplified visualization development
- Improved version control and collaboration

These tools help streamline the implementation of real estate analytics and prediction systems.

10. Development Workflow Support

The combined use of IDEs and tools supports the complete project workflow, including:

1. Dataset collection and preprocessing
2. Exploratory data analysis
3. Machine Learning model development
4. Recommendation system implementation
5. Visualization dashboard creation
6. Streamlit frontend development
7. Testing and debugging
8. Deployment preparation

This integrated development environment improves productivity and system maintainability.

7.4 Development Environment

The development environment of the **Gurgaon Real Estate Intelligence System Using Random Forest and Distance - Location Based Recommendation** provides the necessary platform and configuration required for designing, coding, testing, training, and executing the Machine Learning and analytics components of the project.

A well-configured development environment ensures smooth integration of datasets, Machine Learning models, recommendation systems, visualization dashboards, and the Streamlit web application. It also helps improve development efficiency, debugging, testing, and project scalability.

The development environment combines software tools, programming frameworks, libraries, runtime configurations, and dataset management systems required for the implementation of the project.

1. Python Development Environment

The project is primarily developed using Python because of its extensive support for Machine Learning, Data Science, and web application development.

The Python environment includes:

- Python Interpreter
- Python libraries and dependencies
- Virtual environment configuration
- Package management tools

Python serves as the core runtime environment for executing data preprocessing, Machine Learning training, visualization generation, and backend processing tasks.

2. Virtual Environment Configuration

A virtual environment is created to maintain project-specific dependencies and avoid conflicts between Python packages.

Tools such as:

- virtualenv
- venv

are used to create isolated development environments.

Benefits of using virtual environments include:

- Dependency isolation
- Better package management
- Easier project maintenance
- Improved portability

This ensures that all required libraries function consistently across development systems.

3. Installed Python Libraries

The development environment includes several important Python libraries required for different project modules.

Major libraries include:

Category	Libraries
Data Analysis	pandas, NumPy
Machine Learning	Scikit-learn
Visualization	Matplotlib, Seaborn, Plotly
Web Application	Streamlit
Model Serialization	Pickle

These libraries provide the foundation for implementing Machine Learning and analytics functionalities.

4. Dataset Storage and Management

The development environment includes organized dataset storage directories for handling raw and processed housing datasets.

Dataset management includes:

- Raw dataset storage
- Cleaned dataset storage

- Processed dataset handling
- Feature-engineered dataset management

Datasets are mainly stored in:

- CSV format
- Excel format

Efficient dataset organization improves preprocessing and model training operations.

5. Machine Learning Development Environment

The Machine Learning development setup includes tools and frameworks for training and evaluating regression models.

The environment supports:

- Model training
- Model testing
- Feature engineering
- Hyperparameter tuning
- Recommendation system implementation

Regression models such as Linear Regression and Random Forest Regressor are trained within this environment.

6. Visualization Development Environment

Visualization tools are configured to support graphical analysis and dashboard generation.

The environment supports development of:

- Scatter plots
- Histograms
- Heatmaps
- Interactive dashboards
- Analytical charts

Visualization integration helps convert housing data into understandable graphical insights.

7. Streamlit Application Environment

The frontend interface is developed using the Streamlit framework.

The Streamlit development environment supports:

- Interactive user input forms
- Real-time prediction display
- Recommendation dashboards
- Analytics visualization
- Dynamic filtering and interaction

The Streamlit runtime environment enables rapid development and testing of the web application.

8. Development Tools and IDE Support

The development environment includes modern IDEs and tools for coding, testing, and debugging.

Major tools include:

- Jupyter Notebook
- Visual Studio Code
- PyCharm

These tools improve productivity and simplify project management.

9. Version Control Environment

Version control is maintained using Git and GitHub repositories.

GitHub

The version control environment helps:

- Track code modifications
- Manage project versions

- Backup project files
- Support collaboration

Version management ensures project stability and maintainability.

10. Testing and Debugging Environment

The development environment also includes testing and debugging configurations for identifying and resolving system errors.

Testing support includes:

- Python debugging
- Streamlit testing
- Machine Learning model evaluation
- Performance analysis

This helps improve the accuracy and reliability of the application.

11. Benefits of the Development Environment

The configured development environment provides several advantages:

- Efficient Machine Learning implementation
- Simplified debugging and testing
- Faster application development
- Better dependency management
- Improved scalability and portability
- Smooth integration of frontend and backend modules

It supports complete development of the intelligent real estate analysis system.

8 Results

8.1 Functional Validation

The **Gurgaon Real Estate Intelligence System Using Random Forest and Distance - Location Based Recommendation** was successfully tested to validate all major functionalities including house price prediction, recommendation generation, analytics visualization, and interactive dashboard operations.

The system was evaluated using different property inputs to ensure that predictions and recommendations were generated accurately and consistently. Functional testing confirmed that all modules were properly integrated and operating efficiently.

The following functionalities were validated successfully:

- House price prediction
- Property recommendation system
- Dataset preprocessing
- Real-time Streamlit interaction
- Visualization dashboard generation
- Model loading and prediction execution
- User input handling
- Data filtering and analytics operations

The Machine Learning models generated reliable predictions based on property features such as area, location, bedrooms, bathrooms, and amenities. The recommendation system also produced meaningful property suggestions using similarity analysis techniques.

The successful validation of these functionalities demonstrates the practical implementation capability of the system in real-world real estate analysis applications.

8.2 User Experience and Interface

The user interface of the Gurgaon Real Estate Intelligence System was developed using Streamlit to provide a simple, interactive, and user-friendly experience.

The interface allows users to interact with the system easily through dropdown menus, sliders, forms, and interactive dashboards. Users can enter property details, generate

predictions, view recommendations, and analyze visual reports without requiring technical expertise.

Major user interface features include:

- Simple navigation system
- Interactive property input forms
- Real-time prediction display
- Responsive dashboard visualization
- Recommendation result display
- Analytical graph representation

The interface was designed to improve usability and accessibility while maintaining efficient interaction between frontend and backend modules.

User testing showed that the application was easy to understand and convenient for exploring real estate analytics and prediction functionalities.

8.3 AI Integration and Performance

Artificial Intelligence and Machine Learning integration form the core functionality of the system. Regression-based Machine Learning models were successfully integrated into the backend to perform real-time house price prediction.

The AI integration pipeline included:

- Dataset preprocessing
- Feature engineering
- Model training
- Model testing and evaluation
- Real-time prediction generation

Machine Learning algorithms such as:

- Linear Regression
- Random Forest Regressor
- Decision Tree Regressor

were tested and evaluated to identify the most suitable prediction model.

The AI system demonstrated:

- Accurate prediction capability
- Efficient recommendation generation
- Fast response time
- Stable model performance

The recommendation engine using cosine similarity successfully generated similar property suggestions based on property features and user preferences.

The integration of AI technologies improved the intelligence and analytical capability of the overall system.

8.4 System Stability and Deployment

The system demonstrated stable performance during testing and deployment stages.

The application successfully handled:

- Real-time user interactions
- Prediction requests
- Recommendation generation
- Visualization rendering
- Dataset processing operations

The Streamlit-based application executed efficiently on local systems without major performance issues.

The trained Machine Learning model was serialized using Pickle and integrated successfully into the deployment environment, enabling real-time prediction without retraining the model repeatedly.

The modular project structure improved system maintainability and simplified debugging and testing operations.

The deployment setup also supported future cloud hosting and scalability enhancements.

8.5 Early Adoption and Feedback

Initial testing and feedback from users indicated positive responses toward the system's functionality and usability.

Users appreciated features such as:

- Interactive prediction system
- Personalized property recommendations
- Visual analytics dashboards
- Simple user interface
- Fast prediction response

The analytics and visualization features helped users better understand property market trends and compare housing options effectively.

Feedback also highlighted that the recommendation system improved property discovery by reducing manual searching effort.

Suggestions received during testing included:

- Integration of live property APIs
- Map-based visualization
- Advanced filtering options
- Mobile-responsive optimization

These suggestions can be considered for future system enhancements.

8.6 Scalability and Extensibility

The Gurgaon Real Estate Intelligence System was designed using a modular and scalable architecture, allowing future expansion and enhancement of system functionalities.

The project structure supports:

- Addition of advanced Machine Learning models
- Integration with cloud deployment platforms
- Real-time property data integration
- Expansion to other city datasets
- Mobile application integration
- Advanced recommendation algorithms

- Deep Learning-based prediction systems

The modular architecture improves maintainability and enables easy integration of new features without affecting existing functionalities.

The scalability of the system makes it suitable for future enterprise-level real estate analytics applications and intelligent property management solutions.

Different Model Name with R2 scroe and MAE

S.No	Model Name	R^2 Score	MAE
1	Extra Trees	0.893527	0.477488
2	XGBoost	0.895850	0.493456
3	Random Forest	0.890675	0.499226
4	MLP	0.873350	0.548000
5	Gradient Boosting	0.876850	0.569997
6	Linear Regression	0.854609	0.649751
7	Ridge Regression	0.854739	0.652915
8	Decision Tree	0.806930	0.690251
9	AdaBoost	0.756057	0.828901
10	SVR	0.769741	0.834124
11	Lasso Regression	0.059434	1.528906

Observation

- The **XGBoost** model achieved the highest **R^2 Score (0.895850)**, indicating the best prediction performance among all models.
- The **Extra Trees Regressor** produced the lowest **MAE (0.477488)**, showing high prediction accuracy with minimal error.
- Ensemble models such as **XGBoost**, **Extra Trees**, and **Random Forest** performed significantly better compared to linear models.

- **Lasso Regression** showed poor performance with very low R^2 Score and high MAE, making it unsuitable for this dataset.

Screenshots

Home Page:

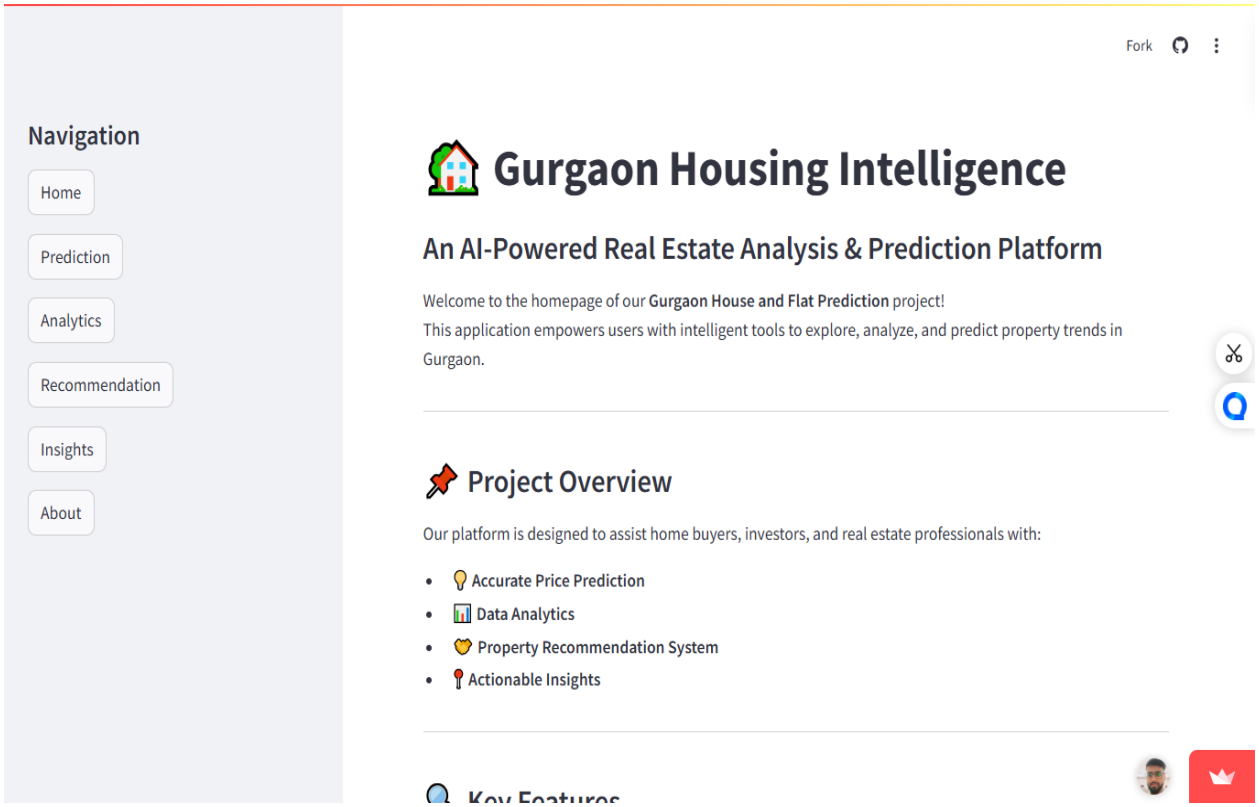

Fig : 8.1 : Home page of my web based application

Prediction:

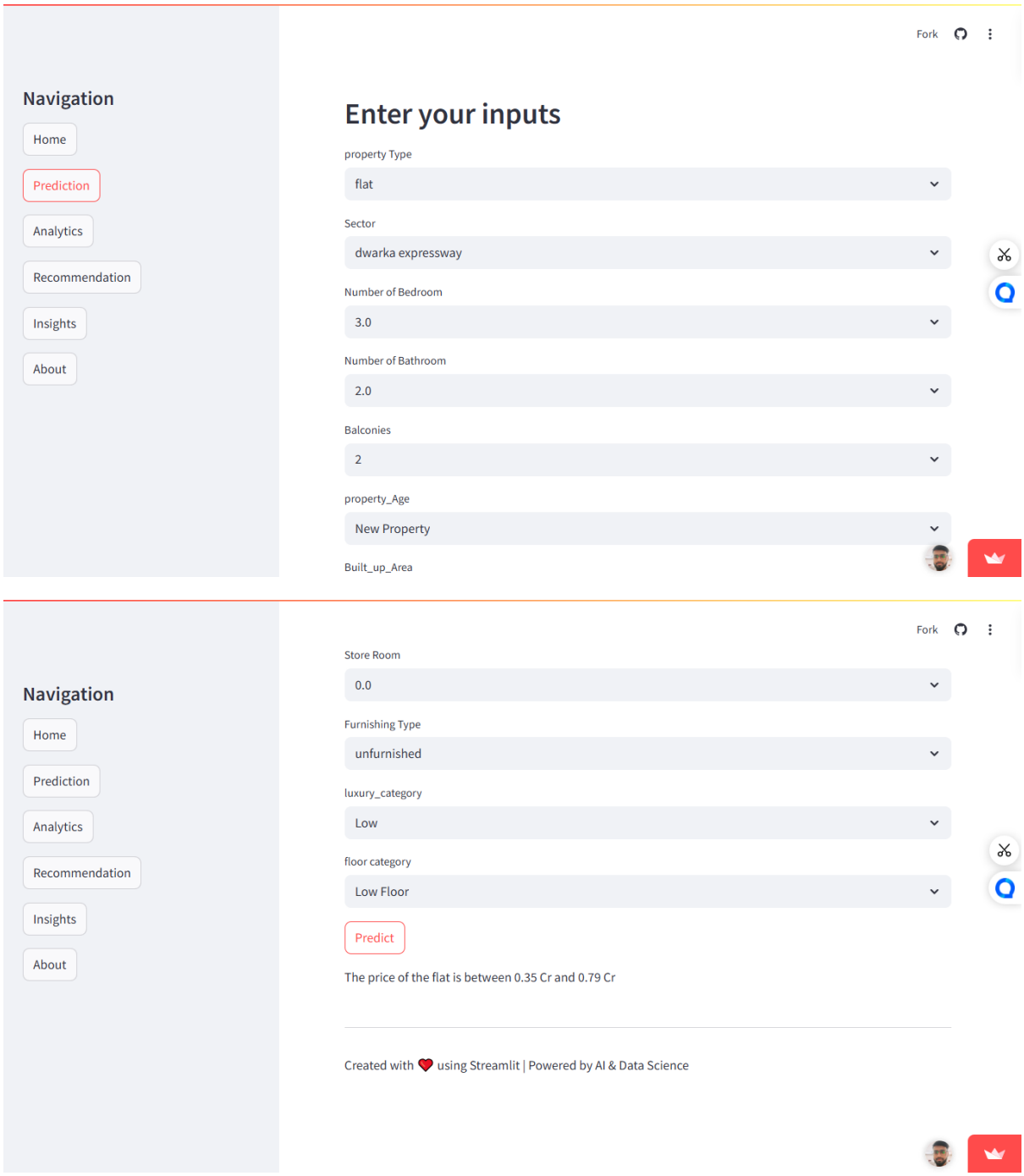

Fig 8.2: House Price Prediction

Analytics Insights:

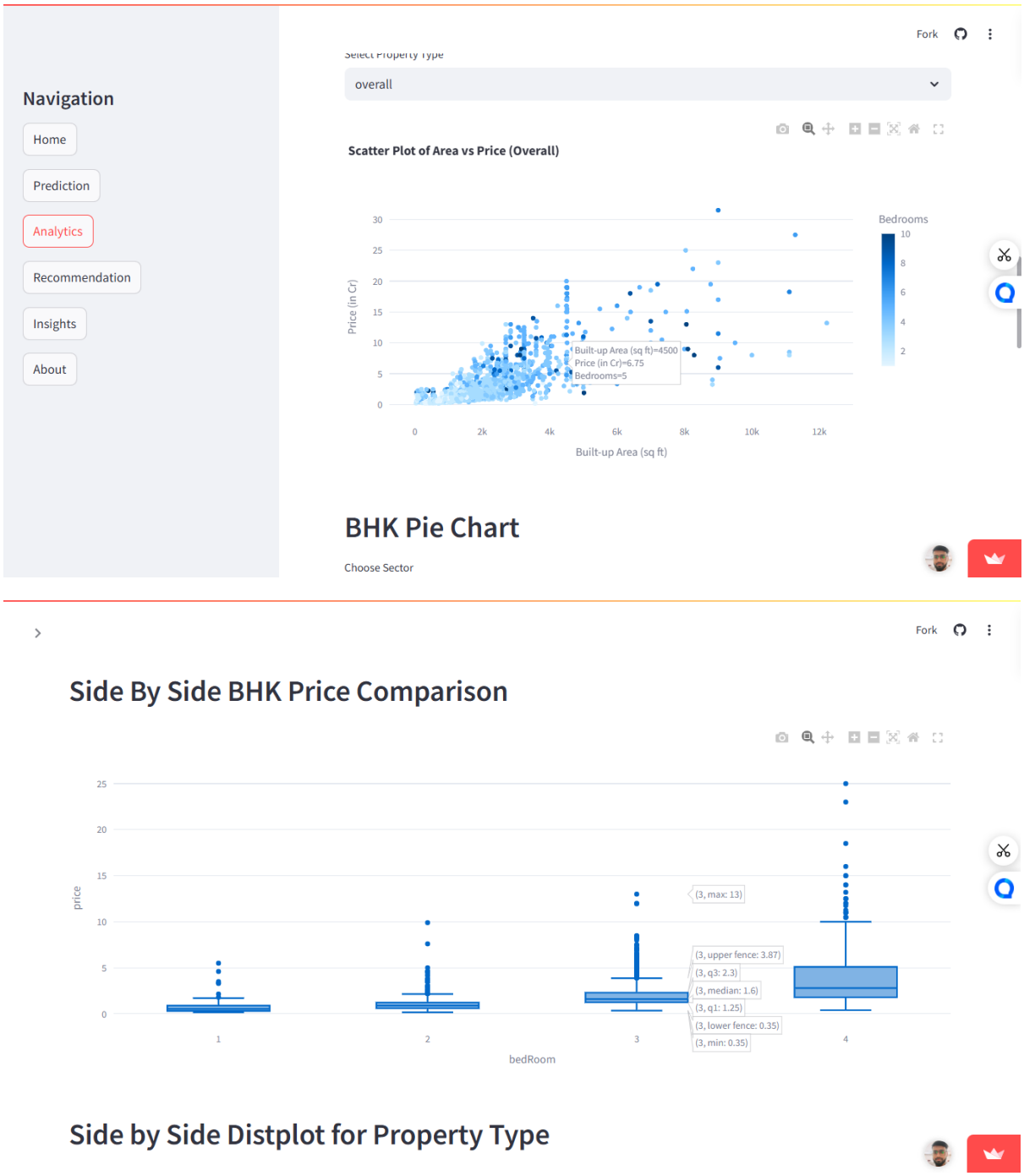

Fig 8.3: Analytics Insights

Recommendation:

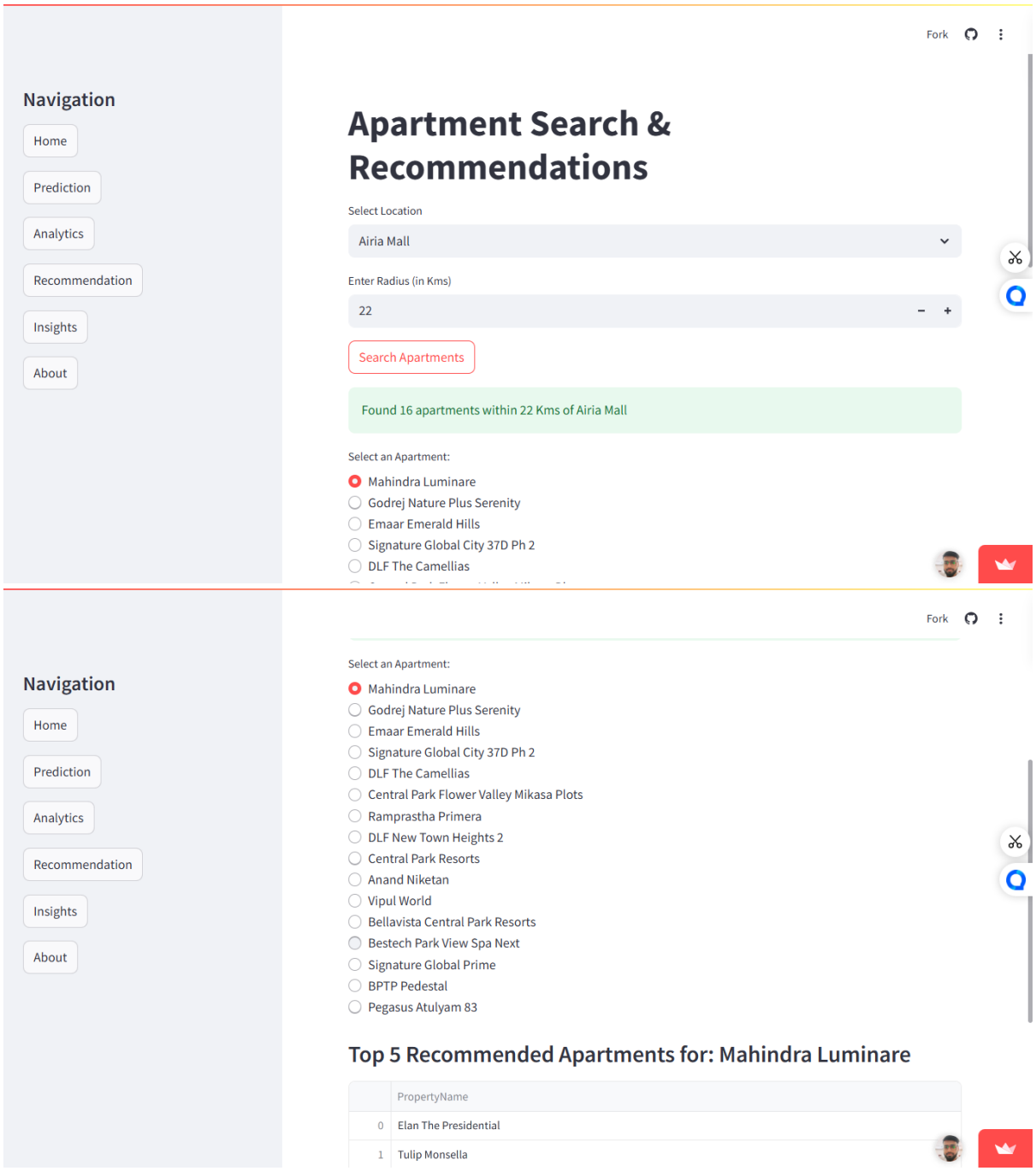

Fig 8.4 : Distance and Location Based Recommendation Apartments

9 Conclusion

The **Gurgaon Real Estate Intelligence System Using Random Forest and Distance - Location Based Recommendation** is an intelligent and data-driven real estate analytics platform developed to simplify house price prediction, property recommendation, and market analysis using Machine Learning and Data Analytics techniques. The project successfully combines predictive modeling, recommendation systems, interactive visualization, and web application development into a unified and user-friendly platform.

The primary objective of the project was to develop a system capable of predicting property prices accurately based on important housing features such as location, area size, number of bedrooms, bathrooms, furnishing status, and amenities. By integrating Machine Learning algorithms and real estate analytics, the system provides valuable insights that help users make informed property investment and purchasing decisions.

The project demonstrates the practical application of Data Science and Machine Learning in solving real-world real estate problems. Traditional property analysis methods often require manual comparison and market research, which can be time-consuming and inefficient. The Gurgaon Real Estate Intelligence System addresses these challenges by automating the prediction and recommendation process using intelligent analytical techniques.

The system was developed using Python-based technologies and modern Machine Learning libraries such as Scikit-learn along with visualization frameworks including Matplotlib, Seaborn, and Plotly. The frontend interface was implemented using Streamlit, enabling interactive user input, real-time prediction display, and analytical dashboard visualization.

During the implementation phase, various Machine Learning algorithms were tested and evaluated, including Linear Regression, Random Forest Regressor, Decision Tree Regressor, Extra Trees Regressor, and XGBoost. Performance evaluation metrics such as MAE, RMSE, and R^2 Score were used to identify the most suitable prediction model. Experimental results demonstrated that ensemble learning models provided higher prediction accuracy and better generalization capability compared to traditional regression approaches.

Among all the tested models, the **Random Forest Regressor** produced highly reliable prediction performance with an **R^2 Score of approximately 90%** and a **Mean Absolute Error (MAE) of 0.44**, indicating strong predictive capability and low prediction error. The model successfully captured complex relationships between property features and housing prices, making it highly suitable for real estate price prediction tasks.

The recommendation system integrated into the platform successfully generated personalized property suggestions using similarity-based filtering techniques. By analyzing property characteristics such as location, amenities, and price range, the recommendation engine improved property discovery and enhanced the user experience. This feature reduced the effort required for manual property searching and enabled users to explore relevant housing options efficiently.

The analytics and visualization module played a major role in transforming complex housing data into understandable graphical insights. Interactive dashboards, price trend analysis, correlation heatmaps, and comparative visualizations helped users better understand market behavior and property trends across different sectors of Gurgaon. These analytical capabilities made the system more informative and practical for real estate analysis.

The project also focused on modular architecture, scalability, and maintainability. Proper dataset organization, preprocessing pipelines, feature engineering techniques, and model serialization methods were implemented to ensure smooth execution and efficient backend processing. The use of Streamlit simplified deployment and enabled rapid integration of Machine Learning functionalities into an interactive web-based platform.

Testing and performance evaluation confirmed that the system operated reliably under different input conditions. Functional validation demonstrated successful integration of prediction models, recommendation systems, visualization dashboards, and frontend interaction modules. The platform achieved stable performance and provided accurate predictions with efficient response times.

Although the current implementation successfully fulfills the core objectives of the project, several future enhancements are possible. Advanced AI models, cloud-based deployment, GIS integration, real-time market analytics, Deep Learning techniques, and personalized recommendation systems can further improve the intelligence and scalability of the platform. These future developments can transform the system into an enterprise-level real estate analytics solution suitable for large-scale deployment and commercial applications.

In conclusion, the **Gurgaon Real Estate Intelligence System Using Random Forest and Distance - Location Based Recommendation** successfully demonstrates how Machine Learning, Data Analytics, and interactive visualization technologies can be integrated to build an intelligent real estate prediction and recommendation platform. The project provides accurate house price prediction, meaningful property recommendations, and interactive analytical insights through a scalable and user-friendly system.

The developed platform not only enhances real estate analysis and decision-making but also highlights the growing importance of Artificial Intelligence and Data Science in modern real estate technology solutions.

10 Future Scope

10.1 Integration with Advanced Machine Learning Models

The current version of the **Gurgaon Real Estate Intelligence System Using Random Forest and Distance - Location Based Recommendation** uses Machine Learning regression algorithms for house price prediction and similarity-based recommendation systems for property suggestions. Although the implemented models provide reliable prediction performance, future integration of advanced Machine Learning and Deep Learning models can further improve system intelligence, prediction accuracy, scalability, and automation capabilities.

Advanced Machine Learning integration will allow the system to analyze complex real estate patterns, large-scale datasets, dynamic market behavior, and user preferences more effectively. These enhancements can transform the platform into a more intelligent and adaptive real estate analytics system capable of handling real-world enterprise-level applications.

1. Need for Advanced Machine Learning Models

Real estate datasets often contain highly complex relationships between property features such as:

- Location
- Area size
- Amenities
- Market trends
- Infrastructure development
- Economic conditions

Traditional regression algorithms may not fully capture these complex patterns in large and dynamic datasets.

Advanced Machine Learning models can help:

- Improve prediction accuracy
- Handle large datasets efficiently
- Capture non-linear relationships
- Learn hidden market patterns

- Provide intelligent recommendations

These models can significantly enhance the overall performance of the real estate intelligence platform.

2. Integration of Ensemble Learning Techniques

Future versions of the system can integrate more advanced ensemble learning algorithms to improve prediction performance and model stability.

Possible ensemble models include:

- LightGBM
- CatBoost

These algorithms combine multiple weak learners to generate highly accurate prediction models.

Advantages of ensemble learning include:

- Better prediction accuracy
- Reduced overfitting
- Improved generalization capability
- Higher stability on large datasets

Ensemble techniques are highly effective for structured real estate datasets.

3. Deep Learning Integration

Deep Learning models can be integrated into the system for advanced pattern recognition and intelligent property analytics.

Future Deep Learning models may include:

- Artificial Neural Networks (ANN)
- Deep Neural Networks (DNN)
- Recurrent Neural Networks (RNN)
- Autoencoders

Deep Learning can improve:

- Complex feature learning

- High-dimensional data analysis
- Market trend prediction
- Personalized recommendations

These models can identify hidden relationships between property features and housing prices more efficiently than traditional algorithms.

4. AI-Based Recommendation Systems

The recommendation module can be enhanced using AI-driven recommendation algorithms instead of simple similarity-based filtering methods.

Future recommendation systems may include:

- Collaborative filtering
- Hybrid recommendation systems
- Deep Learning-based recommendation engines
- User behavior analysis models

These intelligent recommendation systems can generate more personalized and accurate property suggestions based on user interaction history and preferences.

5. Real-Time Market Prediction Models

Future integration of real-time Machine Learning models can enable dynamic market forecasting and live price prediction.

The system can analyze:

- Market fluctuations
- Economic indicators
- Demand and supply patterns
- Property investment trends

This would help users make better investment and purchasing decisions using real-time market intelligence.

6. Natural Language Processing (NLP) Integration

Natural Language Processing techniques can be integrated to analyze textual property descriptions, customer reviews, and real estate news articles.

NLP integration may support:

- Sentiment analysis
- Property review analysis
- Automated property description summarization
- Chatbot-based assistance

This can improve user interaction and provide additional market insights.

7. Automated Feature Engineering

Advanced AI systems can automatically identify important property features and generate optimized feature sets for prediction models.

Automated feature engineering can help:

- Improve model efficiency
- Reduce manual preprocessing effort
- Increase prediction performance
- Handle large-scale datasets effectively

This would make the system more adaptive and intelligent.

8. Hyperparameter Optimization Techniques

Future systems can integrate automated hyperparameter optimization techniques such as:

- Grid Search
- Random Search
- Bayesian Optimization

These techniques help identify optimal model configurations and improve overall model performance.

9. Cloud-Based AI Model Deployment

Advanced Machine Learning models can be deployed on cloud platforms for better scalability and real-time processing.

Cloud-based AI deployment can provide:

- Faster prediction services
- Large-scale dataset handling
- Multi-user support
- High availability

This would improve enterprise-level usability of the platform.

10. Benefits of Advanced Machine Learning Integration

The integration of advanced AI models can provide several advantages:

- Higher prediction accuracy
- Better recommendation quality
- Improved scalability
- Intelligent market forecasting
- Enhanced personalization
- Faster real-time processing
- Better adaptability to market changes

These improvements can make the system more reliable and practical for real-world real estate applications.

11. Challenges and Considerations

Although advanced Machine Learning integration offers many benefits, some challenges may arise, including:

- Increased computational requirements
- Large training dataset requirements
- Model complexity
- Higher deployment costs
- Need for GPU-based processing

Proper optimization and cloud-based infrastructure can help overcome these challenges.

10.2 Scalability and Distributed Architecture

Scalability and distributed architecture are important future considerations for the **Gurgaon Real Estate Intelligence System Using Random Forest and Distance-Location Based Recommendation**. As the volume of real estate data, number of users, and complexity of Machine Learning operations increase, the system must be capable of handling large-scale processing efficiently without affecting performance, reliability, or response time.

The current implementation is suitable for small to medium-scale deployment; however, future enhancements can transform the platform into a scalable enterprise-level real estate analytics system capable of supporting multiple cities, large datasets, real-time analytics, and concurrent user access.

Distributed architecture and scalable infrastructure will help improve system performance, fault tolerance, resource utilization, and deployment flexibility.

1. Need for Scalability

Real estate applications continuously generate large amounts of data from property listings, user interactions, market trends, and recommendation systems.

As the platform grows, challenges may include:

- Large dataset processing
- Increased prediction requests
- Concurrent user access
- Real-time analytics requirements
- High storage demands

A scalable architecture is necessary to ensure that the system continues to perform efficiently under increasing workloads.

2. Horizontal and Vertical Scaling

Future versions of the system can support both horizontal and vertical scaling techniques.

a) Vertical Scaling

Vertical scaling involves increasing hardware resources such as:

- CPU power
- RAM capacity
- Storage space

This improves the performance of a single server system.

b) Horizontal Scaling

Horizontal scaling involves adding multiple servers or computing nodes to distribute workloads efficiently.

This approach improves:

- System availability
- Fault tolerance
- Load balancing
- Concurrent processing capability

Horizontal scaling is more suitable for enterprise-level deployment.

3. Cloud-Based Infrastructure

Cloud computing platforms can be integrated to provide scalable infrastructure and distributed processing capabilities.

Future deployment platforms may include:

- Amazon Web Services
- Google Cloud
- Microsoft Azure

Cloud infrastructure can provide:

- On-demand resource allocation
- Scalable storage
- Distributed processing
- Real-time deployment support
- High availability

This would improve overall system reliability and scalability.

4. Distributed Data Processing

Large-scale housing datasets can be processed using distributed data processing frameworks.

Future integration may include technologies such as:

- Apache Spark
- Hadoop Ecosystem

Distributed data processing can help:

- Handle big datasets efficiently
- Reduce computation time
- Improve parallel processing
- Accelerate Machine Learning training

This is important for enterprise-level real estate analytics systems.

5. Scalable Database Architecture

As property datasets and user interactions increase, the database system must also scale efficiently.

Future database improvements may include:

- Distributed databases
- Cloud database services
- NoSQL database integration
- Database replication
- Automated backup systems

Scalable database architecture ensures faster data retrieval and reliable storage management.

6. Microservices-Based Architecture

The project can be redesigned using a microservices architecture to separate major functionalities into independent modules.

Possible microservices include:

- Prediction Service
- Recommendation Service
- Analytics Service
- Authentication Service
- Visualization Service

Benefits of microservices architecture include:

- Independent module deployment
- Easier maintenance
- Better scalability
- Improved fault isolation

This architecture improves flexibility and modularity of the system.

7. Containerization and Virtualization

Future deployment can use containerization technologies such as:

- Docker

Containerization provides:

- Environment consistency
- Easier deployment
- Faster scalability
- Simplified dependency management

Containers can be deployed across multiple cloud servers efficiently.

8. Load Balancing and Traffic Management

As the number of users increases, load balancing mechanisms can distribute requests across multiple servers.

Load balancing helps:

- Prevent server overload
- Improve response time
- Increase application availability
- Support concurrent users

This improves overall system stability and user experience.

9. Real-Time Data Streaming

Future versions of the system can support real-time property data streaming and live analytics.

Real-time architecture may include:

- Live market updates
- Real-time property recommendations
- Dynamic dashboard updates
- Instant prediction services

This would improve responsiveness and real-time market intelligence.

10. Fault Tolerance and Reliability

Distributed architecture improves system fault tolerance by preventing single points of failure.

Future systems may include:

- Automatic recovery mechanisms
- Backup servers
- Redundant storage systems
- Continuous monitoring services

These features improve system reliability and uptime.

11. Benefits of Scalability and Distributed Architecture

The integration of scalable and distributed architecture provides several advantages:

- Better system performance

- High availability
- Faster processing capability
- Improved user experience
- Enterprise-level deployment support
- Efficient resource utilization
- Support for large-scale datasets

These improvements are essential for future expansion of the platform.

12. Challenges in Distributed System Implementation

Some challenges associated with distributed architecture include:

- Increased infrastructure complexity
- Higher deployment cost
- Network communication overhead
- Distributed security management
- Data synchronization issues

Proper cloud management and architecture planning can help overcome these challenges.

References

[1] R. Banik, S. Ghosh, A. Roy, and D. Ghosh, "House Price Prediction Using Machine Learning Algorithms," *International Journal of Computer Applications*, 2021.

[2] S. Kokila and S. Sujatha, "Real Estate Price Prediction Using Machine Learning Techniques," *International Journal of Advanced Research in Computer Science*, 2020.

[3] MagicBricks Official Website

[4] 99acres Official Website

[5] Housing.com Official Website

[6] NoBroker Official Website

[7] Zillow Official Website

[8] LinkedIn Official Website

[9] GitHub Official Website

[10] Kaggle Official Website

[11] Google Scholar

[12] ResearchGate Official Website

[13] Coursera Official Website

[14] Google Colab Official Website

[15] IEEE Xplore Digital Library

[16] G. Van Rossum and F. Drake, *Python Reference Manual*, PythonLabs, 2001.

[17] Scikit-learn Documentation

[18] Streamlit Documentation

[19] J. D. Hunter, "Matplotlib: A 2D Graphics Environment," *Computing in Science & Engineering*, 2007.

[20] Plotly Documentation

[21] I. Goodfellow, Y. Bengio, and A. Courville, *Deep Learning*, MIT Press, 2016.

[22] A. Géron, *Hands-On Machine Learning with Scikit-Learn, Keras, and TensorFlow*, O'Reilly Media, 2019.

[23] V. Barnett and T. Lewis, *Outliers in Statistical Data*, Wiley, 1994.

[24] F. Ricci, L. Rokach, and B. Shapira, *Recommender Systems Handbook*, Springer, 2015.

[25] T. Hastie, R. Tibshirani, and J. Friedman, *The Elements of Statistical Learning*, Springer, 2009.

[26] D. Montgomery, E. Peck, and G. Vining, *Introduction to Linear Regression Analysis*, Wiley, 2012.

[27] L. Breiman, "Random Forests," *Machine Learning Journal*, vol. 45, no. 1, pp. 5–32, 2001.